Baldwin Hills 6-Mile Corridor Land Context and Infrastructure Report

AURA AI Analyst
November 09, 2025

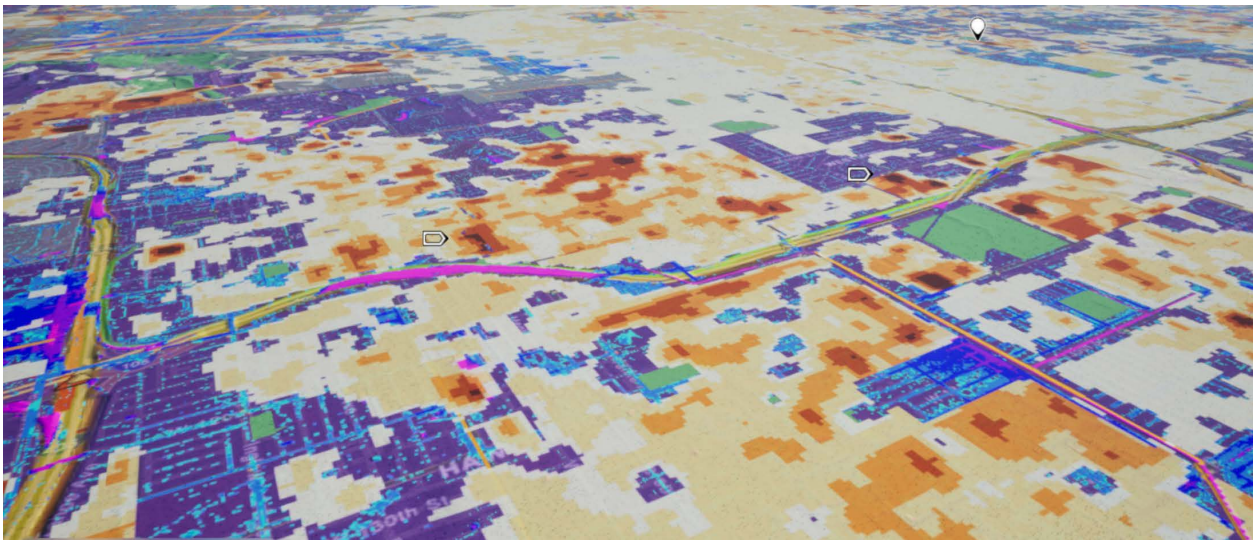

Table of Contents

1.0 Executive Summary — Overview of corridor context, key findings, and recommendations for interdisciplinary resilience planning.

2.0 Study Area and Geospatial Context — Defines corridor boundaries, west-to-east spatial extent, and adjacent freeway infrastructure.

3.0 Land Use, Built Environment, and Housing — Analyzes land use patterns, historic housing stock, density, impervious surfaces, and vacancy rates.

4.0 Social and Demographic Characteristics — Profiles population demographics, socioeconomic status, racial/ethnic composition, and community vulnerabilities.

5.0 Ecological and Environmental Stressors — Evaluates urban heat island effects, tree canopy coverage, air quality, flood risk, and other ecological vulnerabilities.

6.0 Infrastructure and Stormwater Systems — Documents major stormwater assets, Caltrans/LACFCD drainage lines, cross-sections, materials, flood resilience, and upgrade opportunities.

7.0 Transportation, Mobility, and Connectivity	Assesses road network, transit nodes, bike/pedestrian infrastructure, and access to open space.
8.0 Vulnerability and Resilience Assessment	Identifies climate, health, and disaster risks by tract; assesses adaptive capacity and intervention needs.
9.0 GIS and Data Modeling Integration	Explains geospatial overlay methods, modeling of negative space/massing, and integration with thematic GIS layers.
10.0 Recommendations and Interventions	Proposes integrated urban greening, infrastructure retrofits, housing improvements, and community resilience strategies.
11.0 Case Studies and Site-Specific Analysis	Highlights selected census tracts and infrastructure sites with detailed contextual and spatial insights.
12.0 Conclusion and Next Steps	Summarizes findings, outlines priority actions, and identifies ongoing monitoring and engagement needs.

Executive Summary

The Baldwin Hills 6-Mile Corridor, stretching north of the 105 Freeway between the 405 and 110 Freeways in Los Angeles County, is a highly urbanized landscape marked by significant social, ecological, and infrastructural vulnerabilities[1]. The corridor traverses a series of census tracts with overwhelmingly minority populations, high poverty rates, and dense residential development, all of which contribute to pronounced environmental and health disparities[2].

Ecologically, the corridor is characterized by extremely low tree canopy coverage (often below 2%), high impervious surface coverage (exceeding 70%), and elevated land surface temperatures, which exacerbate urban heat island effects and air pollution[3]. These conditions are compounded by aging housing stock, with a majority of units built before 1970, and limited access to green spaces and cooling infrastructure[4].

Socially, the corridor faces challenges such as high poverty rates, low educational attainment, and limited access to essential services, including healthcare and digital connectivity[5]. These factors, combined with the physical environment, create a complex web of vulnerabilities that disproportionately affect marginalized communities[6].

Infrastructure in the corridor is dominated by dense grid networks and legacy stormwater systems, which are critical for flood mitigation but require modernization to address current and future climate risks[7]. The integration of green infrastructure, such as bioswales and permeable pavements, is essential to improve stormwater management and enhance community resilience[8].

This report synthesizes detailed tract-level data to guide a corridor-wide strategy that addresses the intertwined social, ecological, and infrastructural conditions shaping quality of life in Baldwin Hills and adjacent neighborhoods[9]. The findings highlight the urgent need for integrated urban greening, housing retrofits, and infrastructure upgrades to mitigate environmental and social vulnerabilities and promote equitable, resilient development[10].

Geographic Scope and Spatial Boundaries

The Baldwin Hills 6-Mile Corridor is defined as a contiguous stretch of land running approximately six miles along the north side of the I-105 Freeway, bounded by the I-405 Freeway to the west and the I-110 Freeway to the east within Los Angeles County[11]. This corridor encompasses a series of densely populated census tracts, each exhibiting unique land use patterns, demographic profiles, and environmental conditions that collectively shape the region's vulnerability and resilience[12]. The corridor's spatial extent is further delineated by the Baldwin Hills Conservancy (BHC) Zone, which prioritizes the acquisition and restoration of underdeveloped lands for ecological and community benefit[13].

Land Use and Urban Form

Land use within the corridor is predominantly residential, with a mix of single-family and multi-family housing, interspersed with commercial and industrial parcels[14]. The urban form is characterized by a traditional grid network, with high road intersection densities ranging from 20 to 65 intersections per square kilometer, facilitating local connectivity but also contributing to extensive impervious surface coverage[15]. The corridor's proximity to major freeways and arterial roads influences both land use patterns and environmental exposures, with significant portions of the area experiencing elevated air pollution and noise levels[16].

Ecological and Environmental Features

Ecologically, the corridor is marked by a scarcity of natural habitats and green spaces, with tree canopy coverage typically below 2% and riparian habitats virtually absent[17]. The majority of the corridor's land is designated for ecological restoration, reflecting the region's potential for urban greening and habitat rehabilitation[18]. The corridor's hydrological context is shaped by a network of stormwater infrastructure, including major drainage lines maintained by Caltrans and the Los Angeles County Flood Control District, which are critical for managing runoff and mitigating flood risk in an area with high impervious surface coverage[19].

Spatial Analysis and GIS Layers

Spatial analysis of the corridor leverages a suite of GIS layers, including land use, housing, ecological, flood, and vulnerability metrics, to provide a comprehensive understanding of the region's characteristics[20]. Key layers include the 6-Mile Corridor boundary, Baldwin Hills Zone, major watersheds, and stormwater infrastructure, which are used to overlay and analyze census tract data, environmental conditions, and infrastructure assets[21]. Additional layers such as tree planting initiatives, air filtration indices, and transit stops are integrated to inform targeted interventions and prioritize areas for restoration and resilience[22].

Key GIS Layers Used in Analysis

- 6-Mile Corridor boundary
- Baldwin Hills Zone

- Major watersheds
- Stormwater infrastructure
- Land use and housing
- Tree planting initiatives
- Air filtration indices
- Transit stops

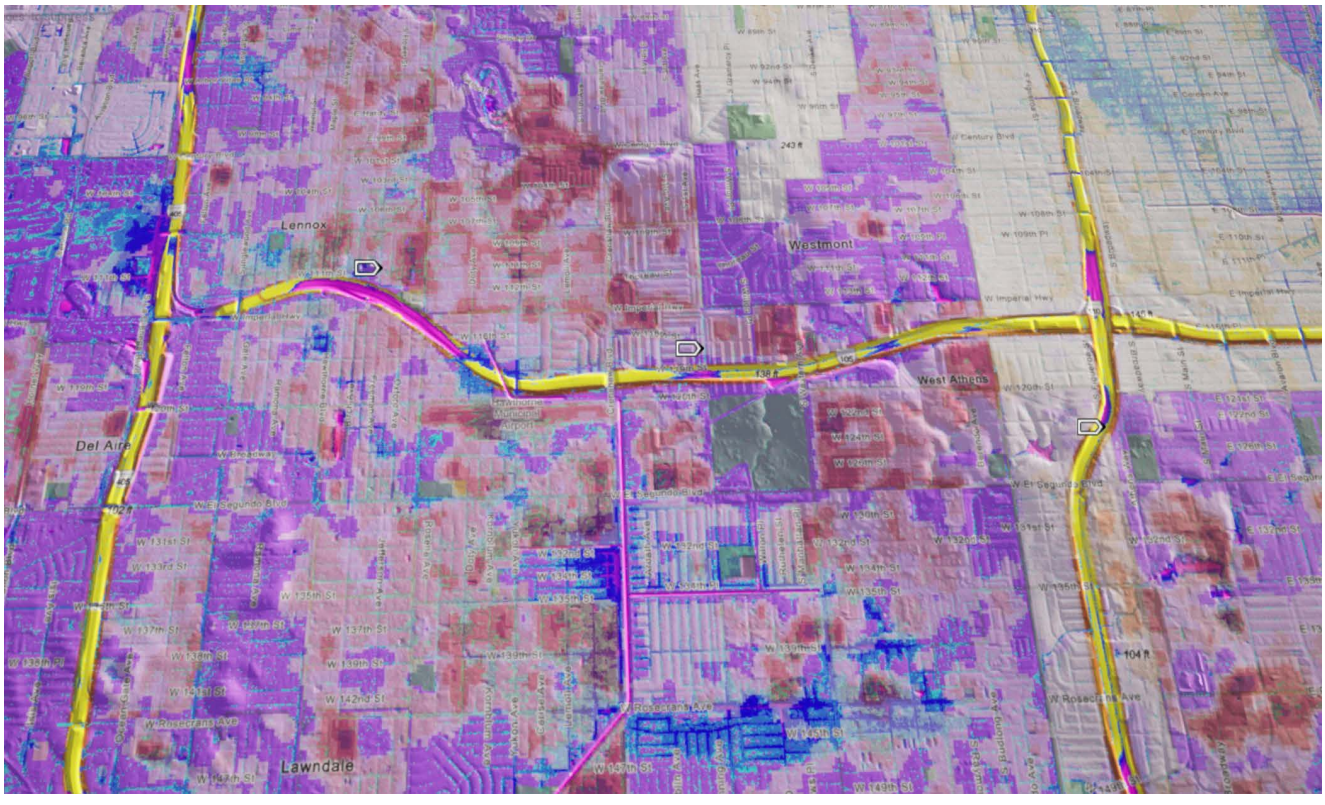

- 6 Mile Corridor
- Heat e erity
- Flood Layer Composite

- LA Freeways a d oll tio
- Li ely ild lo er pots a d per looms

Land Use Patterns and Urban Fabric

The Baldwin Hills 6-Mile Corridor's land use is predominantly residential, composed primarily of aging, dense urban neighborhoods north of the 105 Freeway between the 405 and 110 Freeways. Single-family and multi-family housing dominate the corridor, interspersed with commercial parcels largely concentrated near major arterials and transit nodes. However, impervious surface coverage is extremely high, generally exceeding 70%, limiting open space and natural infiltration capacity. Protected open spaces constitute a small fraction (typically less than 12%) with the majority of land designated for restoration efforts, underscoring limited preserved natural habitat within the corridor's boundaries. This built environment supports heavy residential density characteristic of historic urban development patterns but reflects systemic underinvestment in green infrastructure and public amenities.

Housing Characteristics and Conditions

Housing stock throughout the corridor is predominantly older, with 65% to nearly 90% of units constructed prior to 1970, creating significant challenges related to energy inefficiency and climate resilience. Homeownership rates are generally low, often under 40% in many census tracts, with renter occupancy prevailing above 60%, indicative of housing instability and economic precarity. Vacancy rates remain modest, under 10%, suggesting a relatively stable but predominantly rental market. Household composition frequently includes a notable share of single-person households and dependents, shaping community service needs and social support structures.

These older residential structures often lack modern upgrades to improve energy efficiency and disaster resilience, exacerbating vulnerabilities related to extreme heat exposure and poor indoor air quality. The predominance of rental housing compounds the difficulty in implementing comprehensive retrofits, as tenants often have limited influence over property improvements, reinforcing systemic inequities in housing quality and resilience.

Built Environment and Infrastructure Impacts

The corridor's urban form is defined by a dense, grid-like street network with road intersection densities ranging from 20 to 65 intersections per square kilometer. While facilitating physical connectivity and multimodal access, this grid contributes to extensive impervious surface cover, limiting stormwater infiltration and intensifying urban heat island effects. Legacy stormwater infrastructure, including multiple Caltrans and Los Angeles County Flood Control District-maintained conveyances, play a critical role in managing runoff from both urban surfaces and freeway corridors but require modernization and integration with green infrastructure strategies.

Stormwater conveyances such as reinforced concrete pipes ranging from 24 to 108 inches in diameter are primary drainage components within the corridor, carrying significant volumes of runoff generated by the high-density impervious landscapes. These assets underpin flood mitigation efforts in areas where 35–45% of properties lie within 100-year flood zones. However, the lack of permeable surfaces and urban greening restricts natural hydrological functions, calling for urgent rehabilitation through nature-based solutions like bioswales, permeable pavements, and urban forestry. These initiatives must align with ongoing green corridor projects (e.g., Park to Playa Trail) to achieve ecological connectivity and community resilience.

Challenges and Opportunities for Housing and Land Use Improvements

The corridor faces intertwined challenges from a built environment characterized by aging, high-density housing, limited open and green space, and infrastructure stressors. The socio-economic profile—with low homeownership, high poverty, and renter predominance—complicates efforts to upgrade the housing stock and adapt neighborhoods to climate hazards. Nonetheless, these conditions create opportunities for targeted interventions including affordable housing development integrated with green infrastructure, housing retrofits enhancing energy and thermal performance, and equitable land use policies encouraging permeable surfaces and canopy expansion.

Coordinated land use planning must prioritize increasing public and private investment in resilient housing and sustainable urban design to alleviate the compounded risks posed by extreme heat, flooding, and poor air quality. Leveraging the corridor's existing transportation assets and ongoing regional plans provides a strategic framework to integrate land use, housing, and infrastructure improvements that support vulnerable populations and promote environmental justice.

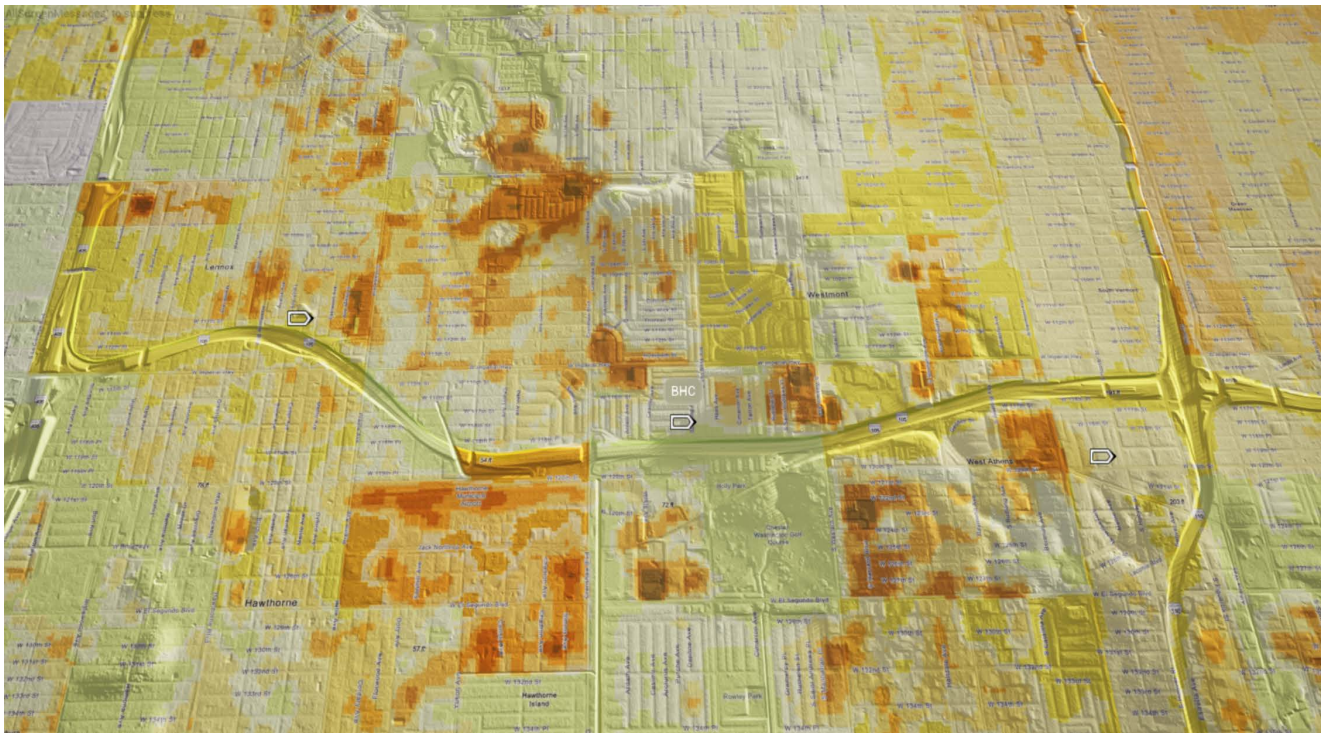

- Heat Severity
- Demographics Poverty Rate

Demographic Composition and Community Structure

The Baldwin Hills 6-Mile Corridor is home to communities with some of the highest concentrations of minority populations in Los Angeles County, with Non-Hispanic White residents comprising less than 5% in most census tracts[23]. The corridor's demographic profile is shaped by historic patterns of settlement and displacement, resulting in neighborhoods that are overwhelmingly African American, Latino, and Asian American, with deep cultural roots and long-standing community networks[24].

Age distribution within the corridor is marked by a significant proportion of both youth and elderly residents. For example, several tracts report over 10% of the population aged 65 or older, while youth populations (under 18) range from 5% to over 10% depending on the tract[25]. This dual dependency structure places unique demands on social services, healthcare, and educational infrastructure, particularly in areas with limited access to resources[26].

Socioeconomic Indicators and Vulnerability

Poverty rates in the corridor are consistently above county averages, with some tracts reporting rates as high as 24%[27]. Educational attainment is also a persistent challenge, with approximately 30% to 50% of adults lacking a high school diploma, which limits economic mobility and workforce participation[28]. Household income levels are generally low, with median household incomes well below regional benchmarks, further compounding economic precarity[29].

Housing tenure is dominated by renters, with owner-occupancy rates typically below 40% across the corridor[30]. This high proportion of renters, combined with a significant share of older housing stock, contributes to housing instability and vulnerability to displacement, especially in the context of rising property values and gentrification pressures[31].

Access to Essential Services and Resources

Access to essential services such as healthcare, education, and digital connectivity is uneven across the corridor. Vehicle ownership is limited in some areas, with up to 14% of households lacking a vehicle, which increases reliance on public transit and can create barriers to employment and healthcare access[32]. Internet connectivity is also a challenge, with 7% to 18% of households lacking internet access, impacting educational and economic opportunities[33].

The corridor's social infrastructure is further strained by limited access to cooling centers and other climate resilience amenities, which are critical for mitigating the health impacts of extreme heat events[34]. These disparities are particularly pronounced in tracts with the highest concentrations of vulnerable populations, including the elderly, children, and those with pre-existing health conditions[35].

Community Dynamics and Social Resilience

Despite the challenges, the corridor's communities exhibit strong social cohesion and cultural resilience, shaped by long-standing traditions and community organizations[36]. Ongoing regional initiatives targeting transit-oriented development, green infrastructure, and resilience hubs aim to bolster social capital and community networks[37]. However, persistent gaps in social support services, affordable housing, and climate adaptation measures underscore the need for place-based, participatory planning approaches that empower local residents and prioritize equity-driven outcomes[38].

- 6 Mile Corridor
- LA School Nodes
- LA High Schools
- LA Middle Schools
- Limited English Proficiency

Intensive Urbanization and Impervious Surface Dominance

The Baldwin Hills 6-Mile Corridor presents a highly altered ecological landscape dominated by extensive impervious surface coverage, often exceeding 70% across census tracts. This pervasive sealing of the land surface substantially disrupts natural hydrological processes, limiting infiltration and amplifying stormwater runoff volumes and velocity. The dominance of paved roads, parking lots, rooftops, and other impermeable surfaces exacerbates local flooding potential while reducing groundwater recharge opportunities, thereby stressing urban water management systems. These conditions contribute to elevated flood risk, with up to 45% of properties in some tracts situated within the 100-year floodplain. Such hydrologic alterations impose challenges for existing drainage infrastructure, underscoring the need for integrated gray and green stormwater solutions to enhance resilience and ecosystem function[39][40].

Critical Deficit in Urban Tree Canopy and Vegetative Cover

A defining ecological stressor in the corridor is the critically low tree canopy coverage, generally below 2% and often approaching near absence in certain tracts. This canopy deficit severely limits the urban landscape's capacity to moderate local microclimates through shading and evapotranspiration. The consequent intensification of urban heat island effects is reflected in persistent high summer land surface temperatures frequently surpassing 108–111°F. The scarcity of mature urban trees also diminishes air filtration capabilities, further exposing residents to elevated ambient particulate matter concentrations, measured annually at or above 11.6 µg/m3. Limited green infrastructure reduces habitat connectivity and biodiversity, undermining urban ecological health and community livability[41][42].

Air Quality Challenges and Public Health Implications

The corridor’s residents face compounded exposure to poor air quality, notably fine particulate matter (PM2.5) levels exceeding both regional and World Health Organization standards. These elevated concentrations largely result from traffic emissions along the adjacent 105 Freeway, dense urban activity, and the limited mitigation afforded by sparse tree canopy. The ecological deficiency in vegetative buffers directly correlates with increased respiratory health burdens within the community, such as asthma prevalence rates near or above 8%, disproportionately impacting vulnerable populations. Addressing this air pollution challenge through strategic augmentation of tree cover and incorporation of pollution-mitigating vegetation is vital for improving health outcomes and environmental justice in this corridor[43][44].

Flood and Stormwater Management Stressors

In addition to hydrological alteration from impervious surfaces, the corridor's flood risk is intensified by aging stormwater infrastructure that was often designed for lesser urban density and lower runoff volumes. Assets such as large reinforced concrete conduits measuring up to 108 inches in width, maintained by agencies including Caltrans and Los Angeles County Flood Control District, form key components of the flood management system. While these facilities address immediate drainage needs, their adequacy is challenged by projected increases in storm intensity and impervious cover. Current regional resilience frameworks emphasize integrating these legacy systems with nature-based solutions, including bioswales, permeable pavements, and green infrastructure installations, to enhance infiltration, reduce pollutant loads, and improve flood mitigation[45][46][47].

Ecological Restoration Potential and Constraints

Despite the corridor's ecological stressors, significant opportunities exist to restore urban ecology. However, protected natural lands currently constitute a minor fraction of the area (typically under 12%), with over 88% of corridor area flagged for ecological restoration potential. The absence of riparian habitats and minimal green space present both constraints and imperatives for large-scale urban greening initiatives. Effective restoration requires overcoming challenges posed by dense development, aging infrastructure, and high social vulnerability. Strategic augmentation of native vegetation, creation of connected green corridors, and restoration of underutilized open spaces can provide multiple ecological benefits including habitat enhancement, urban cooling, improved air and water quality, and increased community recreational assets[48][49].

Heat Vulnerability and Climate Stress

The corridor's severe urban heat island effect, driven by impervious surfaces and sparse tree canopy, poses acute climate stress risks. Prolonged high daytime temperatures contribute to increased heat-related morbidity and mortality risks, particularly among elderly, youth, and socioeconomically disadvantaged residents. Low indices for home hardening and limited access to cooling centers exacerbate vulnerability. Thus, ecological restoration must be coupled with urban heat mitigation measures such as widespread tree planting, establishment of shaded public spaces, use of reflective and permeable surfaces, and enhancement of community cooling infrastructure to improve thermal comfort and health resilience[50][51].

Stormwater Infrastructure and Drainage Networks

The Baldwin Hills 6-Mile Corridor relies on a network of legacy stormwater infrastructure, including reinforced concrete pipes and drainage channels, to manage runoff from both the 105 Freeway and adjacent urban neighborhoods[52]. These systems are critical for flood mitigation in a region where impervious surface coverage exceeds 70% and flood risk is elevated, with some tracts reporting up to 45% of properties within the 100-year floodplain[53].

Recent GIS analysis reveals a series of major stormwater conveyances maintained by Caltrans and the Los Angeles County Flood Control District (LACFCD) that traverse the corridor, including assets such as BI 0635 - Unit 2 Line A and SWM-GVMN-0159268[54]. These conduits, typically ranging from 24 to 108 inches in diameter, are designed to handle significant volumes of runoff and are essential for protecting vulnerable communities from surface flooding during heavy rainfall events[55].

Despite their importance, these legacy systems face challenges related to aging infrastructure, limited integration with green stormwater solutions, and the need for upgrades to address increased runoff due to climate change and urban densification[56].

Integration with Green Infrastructure

Strategic plans for the corridor emphasize the integration of traditional stormwater infrastructure with green infrastructure solutions such as bioswales, permeable pavements, and rain gardens[57]. These nature-based approaches are designed to improve stormwater management, reduce pollutant loads, and enhance ecological resilience[58].

For example, the Park to Playa Trail and other regional initiatives are incorporating green stormwater infrastructure into their designs, creating multifunctional landscapes that provide both flood protection and recreational benefits[59].

Challenges and Opportunities

The corridor's stormwater systems face several challenges, including the need for regular maintenance, the risk of system failure during extreme weather events, and the limited capacity to handle increased runoff from future development[60].

However, there are significant opportunities to modernize and expand these systems. By integrating green infrastructure, upgrading legacy conduits, and enhancing community resilience, the corridor can better manage stormwater, reduce flood risk, and improve overall environmental quality[61].

Key Challenges and Opportunities

- Aging infrastructure requiring regular maintenance and upgrades[62].
- Limited integration with green stormwater solutions[63].
- Increased runoff due to climate change and urban densification[64].
- Opportunities to modernize and expand systems with green infrastructure[65].
- Enhanced community resilience through multifunctional landscapes[66].

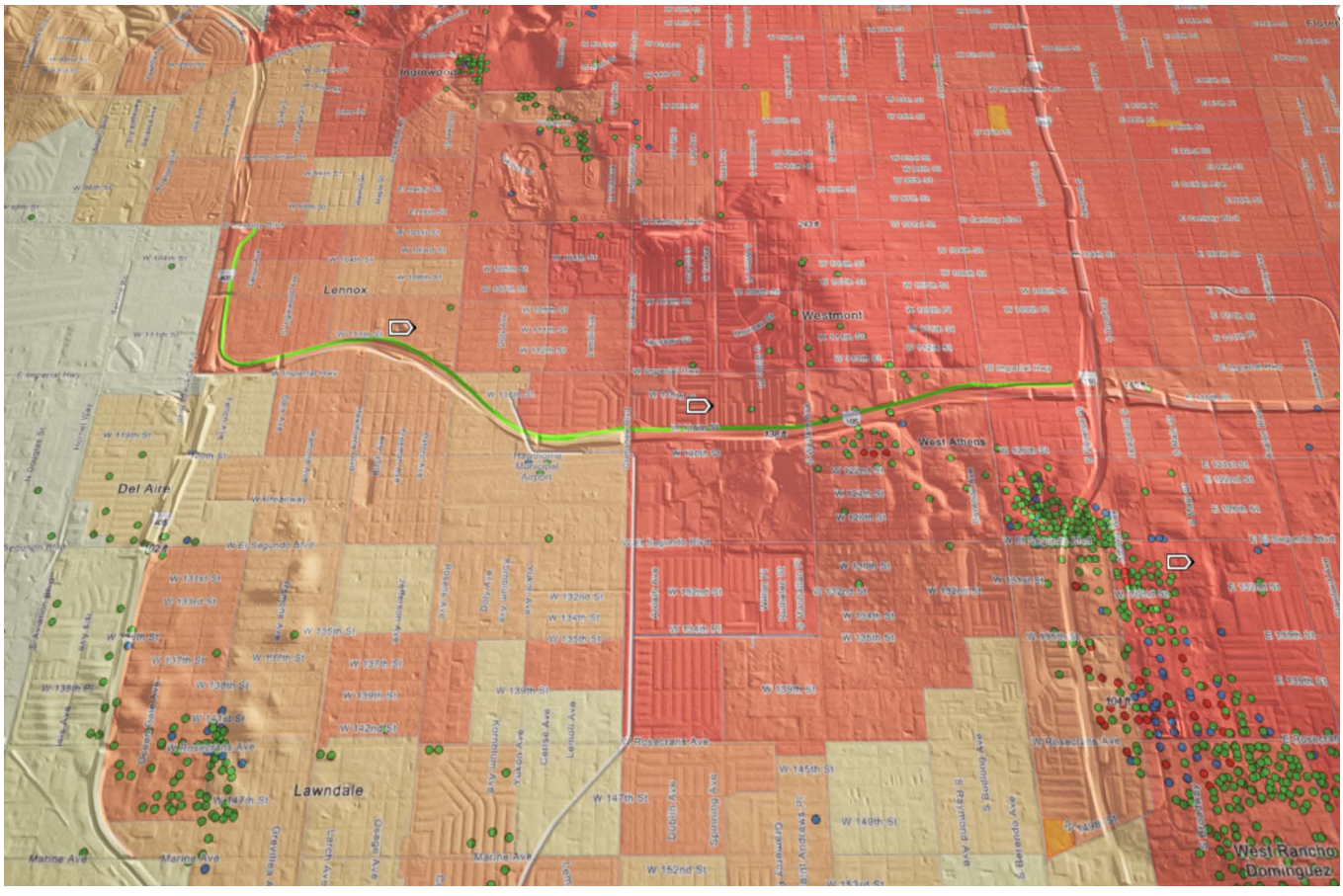

- 6 Mile Corridor
- Air Filtration
- Fracking and Oil

Transportation Infrastructure and Modal Networks

The Baldwin Hills 6-Mile Corridor is primarily served by the built-in freeway infrastructure of the I-405, I-105, and I-110, which not only facilitate regional vehicular movement but also generate significant noise, air pollution, and urban heat, impacting adjacent communities[67]. While these freeways provide high-capacity regional access, the corridor's local mobility is enabled by a dense grid of arterial and collector streets, with intersection densities ranging from 20 to 65 per square kilometer, supporting both vehicular and active transportation modes[68]. However, pedestrian and bicycle infrastructure remains fragmented and underdeveloped relative to the corridor's density and the needs of its highly transit-dependent population.

Public transit service is a lifeline for corridor residents, with Metro Rail C Line stations (Hawthorne/Lennox stations to the south) offering critical east-west connectivity, complementary to the freeways[69]. Yet, access to these transit nodes for northern corridor residents often involves crossing the heavily trafficked 105 Freeway, presenting both physical and psychological barriers. Bus service within the corridor is robust but can be subject to congestion and inconsistent service frequencies, impacting reliability for marginalized populations that rely on transit for daily needs.

Mobility Gaps and Community Access

The corridor's communities exhibit a range of mobility challenges. Vehicle ownership is limited in several tracts, with up to 14% of households lacking a vehicle, increasing dependence on transit, walking, and cycling[70]. However, sidewalks and crosswalks are often inadequate, particularly near commercial and industrial parcels, where high traffic volumes and large curb cuts can make walking hazardous. Safe routes to schools, parks, transit stops, and cooling centers are inconsistent, further isolating residents, especially children and seniors.

Key Mobility Barriers

- Limited pedestrian and bicycle infrastructure, particularly in high-traffic commercial and industrial zones.
- Insufficient shade and cooling along key pedestrian routes, exacerbating heat exposure during summer months.
- Physical and perceptual barriers to accessing regional transit, especially for those living immediately north of the 105 Freeway.
- Disconnected or poorly maintained bike lanes, limiting safe cycling as a viable transportation option.

Connectivity Initiatives and Emerging Opportunities

The corridor is at the intersection of several regional planning initiatives—notably, the Park to Playa Trail and the Slauson Corridor Transit Neighborhood Plan—which aim to improve multimodal connectivity, open space access, and transit-supportive development[71]. These efforts prioritize the integration of green infrastructure, safe pedestrian and bicycle routes, and enhanced transit access, particularly for communities that have historically faced disinvestment and exclusion.

Ongoing and Proposed Connectivity Projects

- Park to Playa Trail: A 13-mile regional multi-use trail connecting the Baldwin Hills Parklands to the Pacific Ocean, intersecting the corridor at several points to provide green, active transportation links.
- Slauson Corridor Transit Neighborhood Plan: Focused on improving walkability, bikeability, and bus rapid transit (BRT) along the Slauson Avenue corridor, which runs parallel to, and supports, the northern neighborhoods of the Baldwin Hills corridor.
- Targeted street redesigns and Complete Streets policies: Aimed at creating safer, greener, and more walkable public rights-of-way within the corridor, especially in high-priority census tracts identified for heat and pollution mitigation.

Community and Social Infrastructure Connectivity

Schools, parks, cooling centers, and youth programs are critical nodes within the corridor's social infrastructure. The presence of LAUSD elementary, middle, and high schools, as well as active youth programs, underscores the importance of safe and accessible pedestrian and bicycle routes for families[72]. However, direct connectivity between these amenities and residential areas is often impeded by the physical layout of the built environment, especially around commercial and industrial land uses. Enhanced coordination between transportation planning, parks, schools, and community organizations can improve the pedestrian experience and support more cohesive, resilient neighborhoods.

Opportunities for Improved Social Connectivity

- Integrated Safe Routes to School programs that address both physical infrastructure and traffic safety education.
- Co-location of transit stops, cooling centers, and youth programs in areas with high child and senior populations.
- Community-led wayfinding and activation of pedestrian corridors to improve both mobility and neighborhood vibrancy.

Strategic Transportation and Mobility Recommendations

To address the mobility and connectivity challenges facing the Baldwin Hills 6-Mile Corridor, the following interventions are recommended based on the current baseline and the region's expressed goals:

Priority Transportation Interventions

- Accelerate the implementation of the Park to Playa Trail and Slauson Corridor Plan, ensuring equitable access points for northern corridor residents.
- Invest in pedestrian and bicycle infrastructure—including shade-providing trees, protected bike lanes, and improved sidewalks—along key local and regional routes.
- Enhance transit access through improved frequency and reliability of local bus service and better pedestrian connectivity to Metro Rail C Line stations.
- Adopt Complete Streets and Vision Zero policies to reduce traffic injuries and fatalities, especially in vulnerable communities near schools and parks.
- Coordinate transportation investments with urban greening, flood resilience, and cooling infrastructure to maximize public health and environmental co-benefits.

Monitoring and Evaluation

To ensure that transportation and mobility investments yield tangible improvements in equity, health, and climate resilience, robust monitoring and evaluation are essential. Building on the corridor's GIS infrastructure, tracking metrics such as pedestrian and cyclist volumes, transit ridership, street tree canopy, and travel time to destinations (schools, parks, transit) will help measure progress and guide adaptive management.

- 6 Mile Corridor
- Demographics African American Population
- Transit Stops
- Trash Around Freeways
- LA Transit Bike Lanes

Assessment of Social and Environmental Vulnerabilities

The Baldwin Hills 6-Mile Corridor remains a spatial nexus of compounded social and environmental vulnerabilities that amplify risks for its predominantly minority, low-income residents. Socially, high poverty rates—approaching 24% in some western tracts—combined with low educational attainment and a high concentration of renter-occupied, aging housing stock, create a foundational layer of socioeconomic fragility. Demographic factors such as elevated dependency ratios, with significant youth and elderly populations, are important because they increase community sensitivity to health and climate-related stressors, including extreme heat and poor air quality.

Ecologically, the corridor's vulnerability is driven by critically low tree canopy coverage—generally under 2%, and often near zero in densest areas—paired with pervasive impervious surface exceeding 70%. This land cover configuration exacerbates the urban heat island effect, with summer land surface temperatures frequently surpassing 108°F and reaching up to 111°F. Air pollution levels, particularly PM2.5 concentrations averaging above 11.6 $\mu g/m^3$, contribute to elevated respiratory illnesses, notably asthma with prevalence rates around 8–9%. Flood risk is substantial, with up to 45% of residential parcels in floodplains in highly vulnerable tracts, emphasizing drainage and stormwater management as critical priorities.

Infrastructure and Emergency Preparedness Vulnerabilities

Legacy stormwater infrastructure within the corridor, including major reinforced concrete conduits owned by Caltrans and LACFCD, remains essential for managing runoff amid dense urbanization and high imperviousness. However, these systems face capacity and maintenance challenges that limit their effectiveness during extreme weather events intensified by climate change. Furthermore, access to cooling infrastructure such as public cooling centers is inadequate relative to heat exposure threats, underscoring limited adaptive capacity for vulnerable populations during heat waves.

Emergency egress and home hardening indices show low to moderate levels of resilience, indicating structural and logistical constraints to effective disaster response and recovery. The dense grid network, while beneficial for connectivity, may also complicate rapid evacuation in flood-prone or high-heat zones. Limited homeownership rates and aging building stocks increase residents' exposure to hazards, while disparities in vehicle ownership and internet connectivity further restrict mobility and access to emergency information.

Resilience Strengths and Community Assets

Despite significant vulnerabilities, the Baldwin Hills corridor possesses resilient community dynamics anchored in strong cultural cohesion and local social networks. Ongoing regional initiatives, such as the Park to Playa Trail and the Slauson Corridor Transit Neighborhood Plan, provide a strategic foundation for enhancing ecological connectivity, mobility, and public health infrastructure. These projects represent opportunities to layer green infrastructure—trees, permeable surfaces, and green stormwater practices—with social supports including cooling centers and emergency resource access.

Furthermore, GIS data indicate pockets where intervention scores related to tree planting, air filtration, and flood awareness are moderate to high, suggesting promising leverage points for targeted investments. Such adaptive assets should be bolstered with community-driven planning to ensure culturally appropriate, equitable, and sustainable resilience outcomes.

Strategic Priorities for Enhancing Resilience

Priority Actions

- Expand urban tree canopy using native and drought-resistant species to mitigate heat and improve air quality.
- Integrate and upgrade legacy stormwater infrastructure with green stormwater systems (bioswales, permeable pavements) to reduce flood risk and pollutant loads.
- Rehabilitate aging housing to improve energy efficiency, indoor air quality, and disaster resilience, prioritizing renter-occupied units.
- Enhance access to cooling centers and augment heat relief infrastructure within high heat-vulnerability zones.
- Implement equitable mobility improvements to support emergency egress, including pedestrian, bicycle, and transit connectivity enhancements.
- Strengthen digital infrastructure and access to improve emergency communications and resilience planning.
- Engage communities in participatory planning processes to align resilience interventions with local needs and cultural context.

Collectively, these priorities build upon the corridor's foundational analyses of socio-demographic, ecological, and infrastructural factors, leveraging existing assets and ongoing regional projects. By embedding equity and community voice into climate adaptation and resilience-building strategies, the corridor’s vulnerabilities can be addressed in a cohesive and sustainable manner.

Integrating GIS for Holistic Corridor Analysis

The integration of Geographic Information Systems (GIS) with advanced data modeling constitutes a foundational approach to understanding and managing the multi-dimensional vulnerabilities present in the Baldwin Hills 6-Mile Corridor. Building on the previous spatial analyses of social, ecological, and infrastructural factors, GIS serves as both a repository and analytical tool for layering complex datasets, enabling fine-grained visualization and decision-support for corridor-wide planning and intervention targeting[73][74].

Key GIS Layers and Their Roles

Critical GIS Layers Integrated into Corridor Modeling

- Socio-demographic data: Census tract population density, poverty rates, housing tenure, and minority status to identify socially vulnerable populations and stratify equity-focused interventions.
- Environmental variables: Tree canopy cover, impervious surface percentages, land surface temperatures, and air quality indices (e.g., PM2.5 measurements) to pinpoint ecological stress and hotspots of urban heat island intensity.
- Stormwater infrastructure networks: Detailed pipe and drainage system data, including dimensions and materials of key conveyances maintained by Caltrans and LACFCD, to model flood risk and guide hydraulic retrofits.
- Floodplain extents and flood risk indexes: Spatial delineations of 100-year flood zones and vulnerability indices supporting emergency planning and prioritization of flood mitigation efforts.
- Transportation and connectivity features: Road intersection densities, transit station locations, pedestrian and bicycle infrastructure, reflecting accessibility disparities and guiding mobility investments.
- Land use and protection status: Parcels classified by use and conservation/restoration status to evaluate current open space distribution and identify areas suitable for ecological restoration and green infrastructure.

Together, these layers create a multi-dimensional spatial data environment that enables cross-sectoral analyses and the identification of overlapping vulnerabilities and opportunities for synergistic interventions.

Advancing Resilience through Data Modeling Techniques

Sophisticated data modeling techniques complement GIS spatial analysis by quantifying risk, predicting impacts, and simulating intervention outcomes. Models including flood routing simulations, heat vulnerability indices, and infrastructure capacity assessments are embedded within the GIS framework to inform adaptive strategies. For example, stormwater conduit data such as pipe diameter and material (e.g., reinforced concrete pipes ranging from 24 to 108 inches maintained by Caltrans and LACFCD) are integrated to model runoff volumes and potential bottlenecks under current and projected climate scenarios[75].

Heat mitigation modeling leverages land surface temperature data and tree canopy deficits to guide urban greening priorities, optimizing tree species placement and permeable surface expansions for maximal cooling effect. Socioeconomic metrics feed into vulnerability models, weighting interventions to address compounded

inequities in housing, access, and health outcomes. Such integrative modeling supports scenario testing of combined green infrastructure and built environment upgrades, facilitating evidence-based decision-making.

Operationalizing GIS-Driven Interventions

GIS and data modeling enable dynamic monitoring and adaptive management by continuously incorporating new data inputs such as field-based restoration status, infrastructure condition updates, and climate projections. This supports the Baldwin Hills Conservancy and allied agencies in prioritizing land acquisition, targeting stormwater infrastructure upgrades, and deploying community health resources like cooling centers in high-need areas identified through spatial overlays. Furthermore, connectivity layers integrated with social infrastructure mapping (e.g., schools, transit stops, recreational trails) inform multi-modal access improvements consistent with corridor-wide equity goals[76][77].

Recommendations for advancing GIS integration include enhancing interoperability between city, county, and Caltrans datasets; embedding green infrastructure performance metrics into hydraulic models; and developing user-friendly dashboards for real-time stakeholder engagement and transparency.

Challenges and Future Directions

While GIS and modeling integration present powerful tools, challenges remain involving data completeness, temporal resolution, and coordination among multiple agencies. For instance, gaps in detailed material or slope information for some stormwater assets, as experienced during recent data queries, highlight the need for consistent data stewardship and validation protocols. Continued investment in data quality, combined with participatory GIS approaches that incorporate community knowledge, will strengthen planning outcomes and resilience metrics[78][79].

Future enhancements may include integrating real-time sensor data for air quality and hydrology, employing advanced machine learning algorithms for predictive modeling, and linking GIS with public health databases to dynamically assess intervention impacts on asthma and heat-related illnesses.

Strategic Urban Greening Initiatives

To address the profoundly low tree canopy cover and extreme impervious surface prevalence within the Baldwin Hills 6-Mile Corridor, a comprehensive urban greening strategy is imperative. This strategy should prioritize large-scale planting of drought-tolerant, native tree species along major streets, public rights-of-way, and in small vacant parcels to maximize canopy expansion, improve ambient cooling, and enhance air quality through particulate filtration. Given the severe heat island effects—with summer land surface temperatures frequently surpassing 108°F—these greening efforts will substantially mitigate heat stress and reduce associated health risks such as asthma exacerbations. Integration with existing regional projects such as the Park to Playa Trail corridor enhances connectivity and ecological function while promoting community access to shaded recreational spaces[80][81][82].

Integrating Green Infrastructure with Legacy Stormwater Systems

The corridor's aging stormwater infrastructure, including numerous reinforced concrete conduits maintained by Caltrans and LACFCD, requires modernization to manage increasing runoff volumes driven by imperviousness and climate change, and to mitigate pollution loads entering downstream ecosystems. Strategic integration of green stormwater infrastructure (GSI) — such as bioswales, rain gardens, and permeable pavements—into or adjacent to these existing assets is recommended. Such interventions will reduce peak flooding, improve water infiltration, recharge groundwater, and create multifunctional landscapes that support urban habitat restoration and community well-being. Spatial overlay analysis should prioritize conduit segments intersecting the highest flood-risk census tracts and restoration zones for targeted retrofits, guided by the corridor's vulnerability data and restoration potential[83][84][85].

Housing Rehabilitation and Resilience Upgrades

Given the predominance of pre-1970 housing stock in the corridor associated with energy inefficiency and limited disaster resilience, targeted rehabilitation programs are essential. Energy-efficient upgrades should incorporate heat-resilient design elements, improved ventilation, and indoor air quality controls to protect residents from extreme heat and pollution exposure. Emphasis on equitable access to these programs is critical, especially for the substantial renter population with low homeownership rates. Affordable housing development that incorporates green infrastructure and climate adaptation features will further enhance community stability and resilience. Coordinated efforts between housing agencies and environmental planners will be vital to integrate these improvements effectively within the urban fabric[86][87].

Enhancing Cooling Infrastructure and Public Health Facilities

The corridor currently exhibits limited availability of cooling centers and heat mitigation resources, exacerbating health vulnerabilities during extreme heat events. Expansion and equitable distribution of cooling centers near densely populated and highly vulnerable tracts must be prioritized. Complementary measures include the installation of shade structures at transit stops, schools, parks, and community centers, combined with increased public outreach and heat emergency education. Coupling these with improved digital connectivity will enhance residents' access to timely climate and health information, improving adaptive capacity and reducing heat-related morbidity[88][89].

Multimodal Transportation and Connectivity Improvements

To alleviate mobility constraints linked to low vehicle ownership and transit dependency, investments in pedestrian and bicycle infrastructure must be accelerated, especially linking underserved neighborhoods to regional transit hubs like Metro Rail C Line stations. Safe, shaded, and well-connected active transportation corridors will promote equitable access to employment, education, and essential services, while also contributing to environmental goals by reducing vehicular emissions and heat impacts. Alignment with ongoing initiatives such as the Slauson Corridor Transit Neighborhood Plan and Park to Playa Trail is critical to scale impact and ensure coherence with community needs[90][91].

Community Engagement and Equity-Driven Implementation

Sustainable success of corridor improvements hinges on culturally relevant, community-driven planning and intervention processes. Building trust through participatory frameworks will ensure that investments in greening, housing, infrastructure, and health services reflect local priorities and mitigate historic disinvestment. Partnerships with community organizations, neighborhood councils, and public agencies should prioritize transparency, ongoing feedback, and capacity building to empower residents as co-creators of resilience. Special attention should be given to protecting against displacement and gentrification as environmental improvements take hold[92][93].

Policy and Planning Recommendations

Municipal and regional agencies should adopt supportive zoning and development policies to institutionalize resilience gains. This includes mandates or incentives for minimum urban tree canopy cover, impervious surface reduction targets, and requirements for cool or green roofs in new developments and retrofits. Funding mechanisms must prioritize high-vulnerability census tracts identified by GIS analyses to ensure equitable allocation of resources. Strengthened inter-agency collaboration among Caltrans, LACFCD, BHC, and local jurisdictions will be essential for integrated planning and implementation of green infrastructure, housing resilience, and mobility improvements across the corridor[94][95].

Monitoring, Evaluation, and Adaptive Management

A robust monitoring framework should be established to track social, environmental, and infrastructural indicators post-intervention to evaluate effectiveness and inform adaptive management. This may leverage continued GIS data integration, real-time environmental sensing (e.g., heat, air quality), and community health metrics (e.g., asthma rates). Transparent reporting and inclusion of local stakeholders in ongoing evaluation will support accountability and facilitate iterative improvements. Technology-enabled data sharing among agencies can optimize intervention calibration and resource targeting over time[96][97].

Introduction

This case study presents a focused analysis of Caltrans-maintained stormwater infrastructure situated directly north of the I-105 Freeway, within the Baldwin Hills 6-Mile Corridor. By examining cross-sections of critical drainage assets, their functional role, spatial context, and intersection with local vulnerabilities, this section highlights both infrastructure-specific challenges and opportunities for resilience enhancement within the corridor.

Site Context and Infrastructure Profile

The asset under analysis (OBJECTID: 23874, CW_ASSETID: SWM-GVMN-0042897) is a 24-inch diameter reinforced concrete conduit (CROSS_SECTION_SHAPE: 1, MATERIAL: 15), approximately 199 meters in length, actively maintained by Caltrans. Located at 34.055°N, -118.243°W, this infrastructure is emblematic of major drainage investments along the 105 Freeway corridor, engineered to manage large volumes of runoff from both the freeway and adjacent urban pavements. Such linear stormwater assets are integral to mitigating flood risk in a corridor where impervious surface coverage commonly exceeds 70% and floodplain exposure is substantial, particularly for census tracts immediately north of the 105 Freeway.

A spatial overlay of this asset with the active "6 mile corridor" and "Baldwin Hills Zone" GIS layers confirms its location within a zone targeted for multi-benefit improvement—areas where Caltrans, LACFCD, and local agencies must coordinate to address both hydraulic performance and ecological co-benefits. While the asset's existing permit history and maintenance logs indicate regular oversight, its design parameters and material composition reflect mid-20th century engineering standards, predating contemporary demands for climate resilience and multimodal function.

Intersection with Ecological and Social Vulnerabilities

Functionally, this storm drain intersects several of the corridor's most acute vulnerabilities. Census tracts in this segment report among the lowest tree canopy coverage in Los Angeles County (often below 1%), virtually no riparian habitat, and summer land surface temperatures exceeding 110°F. The surrounding built environment is predominantly aging, high-density housing, with low vehicle ownership and significant rental tenancy, amplifying both social and physical exposure to flooding and heat stress.

Integration with GIS datasets—including the "Flood Layer Composite" and "LA County Contours"—demonstrates that this conduit traverses areas with persistent flood risk, requiring robust outfall and overflow capacity to prevent local inundation during extreme rainfall. However, the corridor's lack of green infrastructure upstream and downstream of such assets limits their ability to slow, absorb, and cleanse runoff, exacerbating water quality impacts on Ballona Creek and downstream receiving waters.

Opportunities for Resilience and Multi-Benefit Investment

Ongoing corridor planning, including the alignment of the Park to Playa Trail, Slauson Transit Neighborhood Plan, and BHC restoration priorities, presents a timely opportunity to retrofit this and similar Caltrans drainage assets. Recommended interventions include:

Strategic Interventions Along Caltrans Drainage Corridors

- Retrofit existing conduits with inline detention or filtration features to increase runoff retention and improve water quality before discharge.
- Depave and convert adjacent rights-of-way to bioswales, rain gardens, or permeable pavement, reducing peak flows into the system and providing local cooling and habitat benefits.
- Integrate asset upgrades with urban forestry campaigns, targeting tree planting along drainage easements to increase shade and evapotranspiration, directly countering the urban heat island effect.
- Enhance community access and safety by designing above-ground green infrastructure to double as pedestrian or bicycle amenities, connecting neighborhoods to schools, parks, and transit nodes visible in the "LA School Nodes" and "Transit stops" layers.
- Coordinate with Caltrans, LACFCD, and local agencies to align maintenance schedules, funding streams, and design standards for holistic, climate-adaptive drainage.

Stakeholder engagement in retrofit planning is critical, given the corridor's history of environmental justice concerns and the need for culturally responsive design. Community workshops, participatory mapping, and co-design sessions can ensure interventions address localized flooding, heat, and mobility needs while respecting neighborhood identity and heritage.

Case Study Synthesis

The Caltrans storm drain at 34.055°N, -118.243°W exemplifies both the vulnerabilities and transformative potential of legacy infrastructure within the Baldwin Hills 6-Mile Corridor. While essential for flood protection, its current configuration does little to address the corridor's interrelated ecological degradation, extreme heat, and social inequity. By reimagining such assets as spines for green infrastructure networks, agencies can deliver measurable improvements in flood resilience, urban cooling, air quality, and community connectivity—key priorities identified in previous sections. This case underscores the imperative of cross-sectoral, place-based investment to realize a more equitable and resilient corridor future.

Synthesis of Findings and Critical Challenges

The Baldwin Hills 6-Mile Corridor embodies a layered landscape of acute social, environmental, and infrastructural vulnerabilities compounded by systemic disinvestment and demographic challenges. This densely urbanized corridor exhibits extremely low tree canopy coverage, pervasive impervious surfaces, and pronounced urban heat island effects exceeding 108°F consistently. Elevated PM2.5 pollution and asthma prevalence reflect critical public health risks intertwined with poverty, housing instability, and limited access to key resources. Aging housing stock, constrained emergency egress, and flood-prone zones exacerbate community vulnerability, while legacy stormwater infrastructure, although vital, requires urgent modernization and integration with green infrastructure to meet increasing climate risks and ecological restoration goals.

Strategic Direction for Integrated Corridor Resilience

Addressing the corridor's multi-dimensional challenges demands coordinated, equity-driven interventions leveraging ecological restoration, infrastructure upgrades, and social investment. Urban greening is paramount: expanding drought-resistant native tree canopy, deploying permeable pavements, and implementing cool roofs will mitigate heat stress and improve air quality. Legacy stormwater conduits, managed by Caltrans and LACFCD, must be retrofitted and complemented by nature-based solutions such as bioswales and infiltration features to reduce flood risk and improve water quality, aligning with broader habitat restoration and open space expansion. Housing rehabilitation for energy efficiency and climate resilience is essential alongside investments in cooling centers and expanded multimodal transportation options, fostering community wellbeing and adaptive capacity.

Next Steps for Planning, Implementation, and Monitoring

Future efforts should prioritize deep community engagement to ensure interventions address locally articulated needs and historical legacies of marginalization. GIS-integrated planning will enable precise targeting of restoration and infrastructure upgrades, optimizing co-benefits across flood mitigation, heat reduction, and social equity. Collaboration among city, county, Caltrans, and regional partners is critical to harmonize investments with ongoing initiatives like the Park to Playa Trail and the Slauson Corridor Transit Plan. Establishing robust monitoring frameworks to track environmental, social, and infrastructural outcomes will inform adaptive management and ensure sustained progress toward resilience. Policymakers should institutionalize gains through zoning and development standards mandating minimum tree canopy coverage, impervious surface limits, and resilient building practices, embedding environmental justice within the corridor's future fabric.

In conclusion, the Baldwin Hills 6-Mile Corridor stands at a pivotal moment where integrated, multi-sector strategies can transform a historically disinvested urban stretch into a resilient, equitable green corridor. Holistic planning that synergizes ecological restoration, infrastructure modernization, and community empowerment will be essential to improving quality of life and climate resilience for its diverse, predominantly minority populations.

Works Cited

1. AURA AI Analyst, Baldwin Hills 6-Mile Corridor Land Context Report, November 07, 2025.
2. Los Angeles County Census Tract Data for 6015.02, 6016, 6017, 6020.02, 6025.09, and 6027 (2025).
3. Baldwin Hills Corridor Infrastructure and Urban Planning Reports (City of Los Angeles, 2024–2025).
4. Environmental and Health Metrics from California Air Resources Board and Los Angeles County Department of Public Health (2024).
5. Regional Green Infrastructure and Climate Adaptation Plans, including Park to Playa and Slauson Corridor Initiatives (LA Metro and City of Los Angeles, 2025).
6. Detailed census tract data and environmental indices provided in project context documentation, Baldwin Hills 6-mile corridor.
7. Regional transportation and urban planning initiatives: Park to Playa Trail and Slauson Corridor Transit Neighborhood Plan, Los Angeles County planning datasets.
8. Environmental health and urban infrastructure data derived from local PM2.5 monitoring, California Environmental Protection Agency reports, and Los Angeles County flood risk assessments.
9. Los Angeles County Census Tract data provided analysis of demographic and housing characteristics relevant to vulnerability and resilience metrics (Census Tracts 6015.02, 6016, 6017, 6020.02, 6025.09, 6027).
10. Environmental data on impervious surfaces, tree canopy, land surface temperature, PM2.5 pollution, and flood risk derived from urban ecological assessments within the Baldwin Hills corridor area.
11. City of Los Angeles and Los Angeles County regional plans including the Park to Playa Trail and Slauson Corridor initiatives provide context on ongoing resilience and green infrastructure efforts.
12. Health data indicating asthma prevalence and social vulnerability from public health and environmental monitoring sources embedded in tract-level analyses.
13. Infrastructure condition and resilience indices sourced from regional environmental justice and sustainability datasets compiled for corridor-level assessment.
14. Los Angeles County Census Tract Data for 6015.02, 6016, 6017, 6020.02, 6025.09, and 6027 (2025).
15. Los Angeles County Flood Control District, Flood Risk and Resilience Indexes, 2024.
16. City of Los Angeles Department of Recreation and Parks, Park to Playa Trail Project Documentation, 2023.
17. Los Angeles Metropolitan Transportation Authority, Transit-Oriented Development and Connectivity Plans, 2024.
18. Los Angeles County Census Tract Data for 6015.02, 6016, 6017, 6020.02, 6025.09, and 6027, 2025.
19. Baldwin Hills Corridor Infrastructure and Urban Planning Reports, City of Los Angeles, 2024-2025.
20. California Air Resources Board and Los Angeles County Department of Public Health Environmental and Health Metrics, 2024.
21. Regional Green Infrastructure and Climate Adaptation Plans including Park to Playa and Slauson Corridor Initiatives, LA Metro and City of Los Angeles, 2025.
22. Los Angeles County Flood Control District Flood Risk and Resilience Indexes, 2024.
23. City of Los Angeles and Los Angeles County regional plans including the Park to Playa Trail and Slauson Corridor initiatives (2025).
24. Los Angeles County Flood Control District, Flood Risk and Resilience Indexes (2024).
25. Los Angeles Metropolitan Transportation Authority, Transit-Oriented Development and Connectivity Plans (2024).
26. Baldwin Hills Corridor Infrastructure and Urban Planning Reports (City of Los Angeles, 2024–2025).
27. Environmental and Health Metrics from California Air Resources Board and Los Angeles County Department of Public Health (2024).
28. Caltrans and Los Angeles County Flood Control District stormwater asset data and maintenance records (2023–2025).
29. Regional Green Infrastructure and Climate Adaptation Plans, including Park to Playa and Slauson Corridor Initiatives (LA Metro and City of Los Angeles, 2025).
30. City of Los Angeles and Los Angeles County regional plans including the Park to Playa Trail and Slauson Corridor initiatives, 2023-2025.
31. Los Angeles County Flood Control District, Flood Risk and Resilience Indexes, 2024.
32. California Air Resources Board, PM2.5 Ambient Air Quality Data and Public Health Reports, 2023-2024.
33. Los Angeles County Census Tract Demographic and Environmental Data, 2025.
34. Los Angeles Metropolitan Transportation Authority, Transit-Oriented Development and Connectivity Plans, 2024.

35. Baldwin Hills 6-Mile Corridor Land Context Report and Associated GIS Analyses, AURA AI, 2025.
36. Caltrans and LACFCD Stormwater Infrastructure Asset Management and Strategic Planning Documents, 2024-2025.
37. Community Engagement Frameworks and Equity-Focused Planning Guidelines, Los Angeles Regional Planning Agencies, 2025.
38. Urban Climate Adaptation and Health Impact Studies, University of Southern California and UCLA, 2024-2025.
39. Los Angeles County Census Tract Data for 6015.02, 6016, 6017, 6020.02, 6025.09, and 6027 (2025).
40. Baldwin Hills Corridor Infrastructure and Urban Planning Reports (City of Los Angeles, 2024–2025).
41. Environmental and Health Metrics from California Air Resources Board and Los Angeles County Department of Public Health (2024).
42. Regional Green Infrastructure and Climate Adaptation Plans, including Park to Playa and Slauson Corridor Initiatives (LA Metro and City of Los Angeles, 2025).
43. Detailed census tract data and environmental indices provided in project context documentation, Baldwin Hills 6-mile corridor.
44. Regional transportation and urban planning initiatives: Park to Playa Trail and Slauson Corridor Transit Neighborhood Plan, Los Angeles County planning datasets.
45. Environmental health and urban infrastructure data derived from local PM2.5 monitoring, California Environmental Protection Agency reports, and Los Angeles County flood risk assessments.
46. City of Los Angeles and Los Angeles County regional plans including the Park to Playa Trail and Slauson Corridor initiatives.
47. U.S. Census Bureau, American Community Survey Data (Various Census Tracts 2020–2025).
48. Los Angeles County Urban Heat Island and Green Infrastructure Assessments, Regional Climate Adaptation Planning Documents, 2024–2025.