Pando Populus: Comprehensive Environmental and Social Resilience Assessment for Census Tract 1397.02

AURA AI Analyst
December 13, 2025

Table of Contents

1.0 Executive Summary	Overview of key demographic, environmental, and resilience characteristics of Census Tract 1397.02 as the primary Pando Populus site.
2.0 Site Profile and Demographics	Detailed analysis of population (6,447), elderly-heavy composition (24% 65+), high homeownership (88.5%), and low poverty (3.5%).
3.0 Comparative Analysis with Reference Tracts	Contrasts Pando Populus with Tracts 9800.24, 9800.19, and 2657 across density, risks, and resilience indices.
4.0 Environmental Challenges: Heat, Air Quality, and Canopy	Examination of high summer LST (110°F), PM2.5 (10.67 μg/m³), low tree canopy (14.8%), and impervious surfaces (18.7%).
5.0 Flood and Coastal Risks	Assessment of 13.5-15.3% 100-year flood risk, SLR vulnerability (0.29), and absence of riparian buffers in this coastal tract.
6.0 Wildfire Hazard and Resilience Strengths	Evaluation of landscape hazard (711) versus low home risk (0.08), supported by strong hardening and egress indices.

7.0 Social Context and Accessibility	Analysis of elderly vulnerability, car-dependence, and connections to Ventura/Libbit transit stop for residents and visitors.
8.0 Multi-Benefit Mitigation Strategies	Integrated nature-based solutions addressing flood, heat, canopy, fire, and access through permeable clustering and shaded corridors.
9.0 Ecological Restoration and Historical Context	Strategies to restore Chumash/Tongva habitats, reverse fragmentation, and build adaptive NbS for future climate risks.
10.0 Regional Partnerships and Implementation Roadmap	Outreach to urban partners, transit enhancements, and phased plans leveraging Pando's green assets for city-wide impact.

Executive Summary: Pando Populus Resilience Assessment

Pando Populus, located in Census Tract 1397.02 (GEOID: 06037139702) in Los Angeles County, California, is a coastal enclave spanning 9.39 sq km with a population of 6,447 at moderate density (686 ppl/sq km), characterized by 24% residents aged 65+, 86.3% non-Hispanic White, low poverty (3.5%), and high homeownership (88.5%)[1][2]. The site faces interconnected environmental challenges including moderate flood risk (13.5-15.3% properties in 100-year floodplain, SLR vulnerability 0.29), extreme summer heat (110°F LST), low tree canopy (14.8%), elevated wildfire landscape hazard (WF_HazardPotential_Mean 711 despite low RiskToHome 0.08), and poor air quality (PM2.5 10.67 µg/m³, asthma 7.2%) amid 77% protected/undeveloped land and 74% pre-1970 housing[3][4][5].

Comparative analysis with coastal analogs (Tracts 9800.24, 9800.19, 2657) highlights Pando's balanced profile: safer fire risk than sparse high-hazard 9800.19, mid-tier heat versus ultra-hot 9800.24, and lower social vulnerability than urban renter-heavy 2657, with resilience strengths in cooling centers (90th nat'l percentile), home hardening (74th), and egress (71st)[6][7]. Accessibility relies on car dependence but offers potential via nearby Ventura/Libbit transit stop (ID 7028, 5 trips/hr peak, 0.25-mi buffer serving 785 residents including 22% seniors)[8].

Key Multi-Benefit Mitigation Strategies

Integrated Nature-Based Solutions

- Expand native canopy (e.g., coast live oak) in 23% restore zones for flood buffering, heat reduction (LST ↓5-10°F), and fire defensible space[9][10].
- Develop elevated, permeable clustered development with cool roofs, bioswales, and shaded corridors from Ventura/Libbit stop to enhance flood resilience, elder accessibility, and transit equity[11][12].
- Restore Chumash/Tongva habitats via invasive removal and wildlife corridors, leveraging Pando Days youth programs for biodiversity recovery and regional cooling export to heat-stressed areas like Van Nuys[13][14].
- Upgrade transit gateways with green roofs and sensors for real-time flood/heat monitoring, reducing VMT/PM2.5 while supporting 24% elderly and diverse visitors[15][16].

These strategies maintain the site's low intervention score (0) while reversing ecological fragmentation from historical ranchos/sprawl, fostering equitable partnerships with urban tracts, and positioning Pando as a regional resilience demonstration—compact buildings embedded in restored habitat, connected via shaded, flood-smart paths for net-positive environmental impact[17][18].

Geographic and Physical Site Profile

Pando Populus occupies Census Tract 1397.02 within Los Angeles County's coastal zone, featuring a total land area of 8.85 sq km and water area of 0.55 sq km, resulting in 9.39 sq km overall[19]. The site's terrain integrates coastal interfaces with protected natural areas covering 77% of the tract, alongside 18.7% impervious surfaces that influence local hydrology and microclimates[20]. ArcGIS model layers reveal active flood risk overlays, watershed alignments, and proximity to major roadways like Pacific Coast Highway (PCH), positioning the site at the urban-wildland edge with visible contours indicating varied elevations critical for flood and fire zoning[21].

Population and Household Composition

The tract houses 6,447 residents across 2,319 units, with 3.9% vacancy and a dependency ratio capturing 49% of the population as young or elderly[22]. Housing skews toward ownership at 88.5%, with only 7.6% rentals, reflecting entrenched stability amid 74% pre-1970 construction vulnerable to seismic and efficiency shortfalls[23]. Social indicators show 13.4% of households living alone, compounded by 9.2% disability prevalence, necessitating tailored mobility supports[24].

Key Household Metrics

- Total housing units: 2,319, with high occupancy signaling residential focus[25].
- 88.5% owner-occupied, minimizing turnover but amplifying retrofit needs for legacy structures[26].
- Low vacancy (3.9%) indicates demand pressure within protected constraints[27].

Racial and Socioeconomic Characteristics

Non-Hispanic White residents comprise 86.3% of the population, with a 13.7% minority share underscoring limited diversity relative to broader LA County trends[28]. Poverty affects 3.5% of households, alongside 5.4% lacking high school education, positioning the site as affluent yet with pockets requiring inclusive planning[29]. Ventura/Libbit transit buffer demographics mirror this partially, with 17.7% minority and 8.7% poverty among 785 residents and 399 employees[30].

Indicator	Tract 1397.02	Ventura/Libbit Buffer	Implications for Planning[31][32]
Poverty Rate	3.5%	8.7%	Buffer signals equity outreach needs beyond site homogeneity.
Minority %	13.7%	17.7%	Align interventions with diverse commuter profiles.
Seniors %	24%	22%	Unified accessibility demands for aging users.

Mobility and Accessibility Indicators

Only 3.1% of households lack vehicles, paired with 5.9% without internet, enabling robust personal mobility but highlighting transit gaps like Ventura/Libbit's peak-hour service (5 trips/hr)[33][34]. Road network density at 8.6 intersections per sq km supports egress, yet car reliance (96.9% vehicle access) underscores multimodal enhancements for external linkages[35]. Model layers confirm proximity to Metro lines and bike paths, informing green corridor potentials[36].

Comparative Analysis with Reference Tracts

Pando Populus (Tract 1397.02) exhibits a distinctive moderate-density profile relative to three coastal LA County analogs: low-density Tract 9800.24 (27 ppl/sq km), ultra-low-density Tract 9800.19 (3 ppl/sq km), and high-density Tract 2657 (3,760 ppl/sq km), enabling clustered resilience measures that outperform sparse tracts in fire safety while avoiding urban congestion vulnerabilities[37].

Hazard Risk Differentiation

Tract 1397.02's wildfire RiskToHome (0.08) remains low despite high landscape hazard (711), surpassing Tract 9800.19's elevated per-home risk (0.48) from sparse housing amid extreme fuels (3,831) and Tract 9800.24's minimal exposure (0.016, hazard 59), but exceeding Tract 2657's negligible urban risk (0.001, hazard 16)[38]. Flood exposure grows modestly (13.5% to 15.3%), intermediate to Tract 9800.19's high (27-28.6%) and Tract 2657's low growth (7.9-11.4%), with SLR vulnerability (0.29) higher than Tract 9800.24 (0.06) yet far below Tract 9800.19 (0.96)[39]. Heat stress at 110°F positions it between Tract 9800.24's peak (113°F, 3% canopy) and cooler Tract 9800.19/2657 (101°F), benefiting from mid-range canopy (14.8%) absent in denser or sparser extremes[40].

Key Hazard Percentile Rankings (National)

- Cooling Centers: 90th (strongest, vs 62nd-95th in analogs), ideal for heat events[41].
- Home Hardening: 74th (consistent top-tier across low-density analogs, superior to urban 2657 at 31st)[42].
- Flood Awareness: 56th (moderate, lagging behind urban 2657 at 65th but ahead of sparse 9800.24/9800.19 at 30th/37th)[43].
- Trees: 61st (matches 9800.24, exceeds 9800.19 at 36th and urban 2657 at 79th despite impervious contrasts)[44].

Implications for Multi-Benefit Interventions

Density gradients reveal Pando's optimal positioning for integrated NbS: 77% protected land mirrors low-density analogs (79-99.7%) for restoration (23% potential), yet supports permeable clustering absent in urban Tract 2657 (43% impervious, 55% restore but vacancy-constrained)[45]. Analog weaknesses—sparse isolation in 9800.19 (33.8% alone, 42.8% 65+), renter precarity in 2657 (51.4% rent, 11.2% poverty)—underscore Pando's stability for scaling shaded transit links from Ventura/Libbit (5 peak trips/hr), exporting cooling/air filtration to hotter/denser zones via corridors[46][47].

These patterns affirm Pando's intervention score of 0 as regionally advantageous, prioritizing canopy buffers and elevated gateways to mitigate shared PM2.5 burdens (~10.6 μg/m³) while amplifying city-wide equity through partnerships[48][49].

Environmental Challenges: Heat, Air Quality, and Canopy

Pando Populus experiences pronounced urban heat island effects driven by 18.7% impervious surfaces that retain solar radiation, exacerbating the high summer mean land surface temperature of 110.077°F and limiting evaporative cooling across 85.2% of the area lacking canopy cover[50].

Heat Stress Dynamics

The site's heat profile intensifies microclimate stress, with impervious materials contributing to elevated nighttime temperatures and reduced thermal comfort, particularly during prolonged heat events that strain the 24% elderly population's thermoregulation[51][52]. Unlike cooler, open Tract 9800.19 (101°F LST), Pando's denser built environment amplifies radiant heat flux by 10-15% compared to vegetated baselines[53].

Contributing Factors

- Low albedo surfaces dominate, reflecting only 10-20% of incoming solar energy versus 30-50% for shaded vegetation[54].
- 85.2% canopy deficit reduces shading, increasing air temperatures by 5-8°F in exposed zones per LA County urban forestry models[55][56].
- Proximity to coastal wildlands funnels hot, dry Santa Ana winds, compounding LST peaks during fire seasons[57].

Air Quality Pressures

Annual PM2.5 concentrations average 10.67 µg/m³, exceeding WHO guidelines by over 100%, with asthma prevalence at 7.2% indicating heightened respiratory risks amplified by heat-driven inversions that trap pollutants[58][59]. Regional transport from upwind freeways and wildfires overlays local emissions from 8.6 road intersections per sq km[60][61].

Layer data confirms elevated pollution near major watersheds and freeways, where Pando's position intersects transport corridors, elevating fine particulate deposition during stagnant conditions[62][63].

Canopy Coverage Constraints

Tree canopy at 14.8% falls short of LA County's 25-35% equity target, with vegetation layers revealing dominance of sparse coastal sage scrub over dense oak woodlands, limiting pollutant filtration and heat

dissipation[64][65][66]. Historical clearing for pre-1970 housing (74% of units) has fragmented native habitats, reducing interception of 20-30% stormwater and PM2.5[67].

Restoration layers like CA Freshwater Conservation Blueprint and tree planting initiatives identify 23% restore potential in Pando's undeveloped zones for targeted native replanting to boost filtration efficacy by 15-25%[68][69].



Wildfire Potential Risk

Flood Composite

Flood and Coastal Risks

Layer analysis reveals Pando Populus intersects LA County major watersheds, with the Flood Layer Composite indicating dynamic 100-year floodplain boundaries influenced by levees, parapets, and wide dams, projecting risk expansion into adjacent restore zones under SLR scenarios[70][71].

Spatial Patterns from Model Layers

Commercial parcels layer shows low-density commercial exposures along coastal edges aligning with flood composites, while contours (10ft intervals) highlight low-lying coastal flats rising to inland slopes, constraining development to elevated zones away from primary surge paths[72][73].

Key Layer Insights for Risk Zoning

- Flood Layer Composite flags levee/parapet protections but warns of overtopping in 16-level scenarios, prioritizing berm enhancements in 23% restore areas[74].
- Contours and Slope Terrain layers identify buildable benches above base flood elevations, avoiding 15.3% projected risk zones[75][76].
- LA County Major Watersheds layer ties site to coastal drainages, necessitating bioswale networks to divert channelized flows[77][78].

Multi-Benefit Mitigation Leveraging Layers

Integrate Slope Terrain with tree planting LA County layer to site native buffers on 5-15% gradients, reducing surge velocity while expanding filtration against PM2.5 transport via watershed flows[79][80].

Layer-Driven Strategies

- Align permeable access from Ventura/Libbit with contours to high-ground nodes, using fire hydrants layer for pressurized flood response integration[81][82].
- Overlay Wild Fire Potential with flood composites for hybrid zones, planting low-fuel berms that double as wave attenuation[83][84].
- Utilize LA Parks trails and bike paths layers to extend shaded corridors, channeling pedestrian flows away from flood-prone commercial parcels[85][86].

These layer-informed tactics position Pando as a flood-resilient node, exporting watershed buffering to urban partners via NbS corridors while safeguarding elder evacuations on contoured high ground[87][88][89].

Wildfire Hazard and Resilience Strengths

Layer analysis from the Pando Model reveals Wild Fire Potential Area Risk intersecting site edges, aligning with tract-level WF_HazardPotential_Mean of 710.57, driven by chaparral fuels in 77% undeveloped zones where historical fire suppression has elevated flame lengths during Santa Ana winds[90][91].

Hazard Drivers from Model Layers

Key Wildfire Influences

- Fire Perimeter layers indicate past events bordering protected areas, confirming regional ember propagation risks to clustered homes despite low WF_RiskToHome_Mean of 0.0797[92][93].
- LA County Vegetation layer shows coastal sage scrub dominance, with 8.62 road intersections per sq km fragmenting fuels but enabling access for suppression[94][95].
- ASSR Parcel Fire Damage layer flags legacy burn scars on adjacent parcels, underscoring need for 5-10m defensible space around 74% pre-1970 structures[96].

Moderate WF_HousingDensity_MEAN of 255.08 units per sq km clusters exposure, yet WF_Exp_Type_MEAN of 0.58 positions Pando as interface rather than full WUI, buffering direct flame fronts via topography from Slope Terrain layer[97][98].

Resilience Strengths and Layer-Supported Enhancements

Home_Hardening_Index (74th national percentile) excels county-wide (94th), evidenced by Fire Hydrants LA County layer showing dense coverage supporting retrofit enforcement like ember-resistant vents[99][100].

Leveraging Indices with Layers

- Improved_Egress_Index (71st national) pairs with Cnt_Rd_Inter_Per_Sqkm of 8.62 and contours for multi-route modeling, enhancing evac beyond analogs' sparse networks[101][102].
- Air_Filtration_Index (72nd national) integrates with Cooling_Air layer for smoke-ready HVAC in 2,464 properties, mitigating PM2.5 spikes during regional events[103][104].
- Pres_Open_Space_Index supports 77% undeveloped as fuel breaks, amplified by CA Freshwater Conservation Blueprint for low-fuel riparian transitions[105][106].

Future-proofing via tree planting LA County layer targets restore zones with fire-resilient natives, sustaining low intervention score by hardening without canopy loss[107].

Social vulnerability profile for Pando Populus

Pando Populus (Census Tract 1397.02) combines high residential stability and concentrated age-related vulnerability: the tract has a large share of older residents and dependents, very high homeownership, low poverty, and low renter prevalence—conditions that reduce some socioeconomic exposure but raise specific service and mobility needs for elders and people with disabilities[108].

Household composition and living arrangements create operational accessibility needs: a substantial portion of the population is elderly (24% 65+) and almost half the population is dependent (young or elderly), which increases demand for frequent, low-barrier access to services, healthcare, cooling centers, and reliable evacuation support during floods, fires, or smoke events[109].

Barriers and strengths for resident mobility and resilience

Resident-focused access considerations

- Strength — High private mobility: very high homeownership and low percent of households without vehicles supports self-evacuation and access to markets and services under normal conditions[110].
- Weakness — Age and health demands: elevated elderly share and nontrivial disability prevalence mean routine trips (medical, groceries, social) require shorter, safer routes and reliable assistance options[111].
- Weakness — Heat and outdoor exposure: elevated summer land surface temperature (≈110°F) and limited canopy increase thermal risk on walks and during waits for transport, disproportionately affecting older residents[112].
- Weakness — Flood/future SLR exposure: moderate coastal flood risk (13–15% properties in 100-year flood zone; Avg Vul 2050 ≈ 0.29) places some access routes and low-lying homes at risk during extreme events, complicating evacuation for mobility-limited households[113].
- Strength — Strong local resilience assets: high home-hardening and egress index percentiles indicate institutional and physical readiness that can be leveraged to support vulnerable residents during events[114].

Accessibility for visitors and external users

Visitors approach Pando from outside the tract with different constraints than residents: they are more likely to depend on regional transit, to be unfamiliar with local topography and detour options during events, and to experience discomfort from heat or smoke on longer, unshaded walks—factors that reduce equitable access unless mitigated by clear, shaded, and flood-resilient connections[115].

Key visitor access challenges

- Transit frequency and wait times at the nearest practical stop (Ventura / Libbit) are moderate—peak service provides about 5 trips/hour while midday service drops to ~2.5 trips/hour, producing wait times up to ~23 minutes that make door-to-door travel longer and more exposed to heat/smoke[116].

- Walk catchment: the typical 0.25-mile walk buffer around a stop serves a limited population locally, so visitors beyond that buffer must make longer, sometimes unshaded trips to reach site gateways unless improved link infrastructure is provided[117].
- Route uncertainty and single-route dependence: visitors unfamiliar with the safest, elevated egress routes may be delayed during flood or fire events if wayfinding and real-time information are not provided[118][119].
- Comfort and inclusivity gaps: lack of consistent shade, benches, and accessible gradients along feeder routes reduces usability for older adults, people with mobility aids, and families with young children[120].

Design and programmatic measures to improve accessibility for residents and visitors (multi-benefit)

Priority interventions that address social access and environmental risks simultaneously

- Elevated, shaded gateway plazas linked to Ventura / Libbit: place transit gateways on higher ground with permeable paving, bioswales and continuous canopy to shorten exposed walks, capture runoff during storms, and reduce local LST for waiting riders and elders[121][122].
- Universal-design link corridors: build accessible, low-slope, tree-lined ped/bike paths with benches and lighting between the transit stop and main site destinations to provide comfortable, safe routes for older residents and visitors while functioning as linear infiltration corridors for stormwater[123][124].
- Clustered parking + shared mobility at gateways: locate most visitor parking, EV chargers, and car-share hubs at the gateway rather than inside sensitive low-lying areas; use permeable, shaded lots that can double as temporary detention basins during high runoff events[125].
- Transit stop upgrades as resilience hubs: work with the transit agency to add cool/green roof shelters, real-time arrival displays, solar lighting, and adjacent rain gardens so stops become comfortable, filtered-air waiting places that reduce heat/smoke exposure for older riders[126].
- Targeted mobility assistance programs: establish an on-demand shuttle or volunteer driver network for elders and mobility-limited residents during extreme heat, smoke, and flood alerts, integrated with local emergency notification systems and wayfinding apps[127].
- Wayfinding + real-time alerts: deploy signage and a simple web/app interface showing the accessible route, current flood/closure status, transit arrivals (leveraging Ventura / Libbit trip data), and locations of cooling centers and accessible parking—reduce visitor uncertainty and speed evac decisions[128].
- Prioritized maintenance and greening of feeder streets: plant low-fuel, native trees in the first 100–300 m from the gateway to amplify canopy quickly where it benefits both residents and transit users, reducing LST and providing immediate shade for walks[129].

Operational and governance recommendations

To ensure accessibility measures are effective and equitable, implement a cross-sector governance approach that pairs neighborhood organizations, LA County transit planners, public health/aging services, and the Pando stewardship group to coordinate funding, maintenance, and emergency protocols[130].

Recommended operational steps: 1) formalize a transit-gateway agreement with LA Metro to upgrade Ventura / Libbit shelters and signage; 2) pilot an accessible link corridor with monitoring of LST, walk volumes, and perceived safety from targeted user groups (elders, caregivers, visitors); 3) create an assisted-transport roster for high-risk days combining volunteer drivers and microtransit subsidies—each step should include

measurable targets for reduced pedestrian exposure, improved on-time transit connections, and expanded canopy cover near routes[131][132][133].

Metrics and monitoring to track accessibility outcomes

Suggested indicators (short list)

- Average walk time and shade coverage along gateway routes (minutes; % of route shaded at midday) to assess heat exposure reductions[134].
- Transit reliability and wait times at Ventura / Libbit (trips per hour; max wait) to quantify service improvements for visitors and residents who depend on bus access[135].
- Number of assisted rides provided during extreme-event days and percentage of at-risk residents served to measure social support effectiveness[136].
- Stormwater captured by bioswales and detention areas at gateways (m3 per event) to verify flood mitigation co-benefits[137].
- Canopy cover change within 300m of corridors and gateways (% canopy) to track cooling and air filtration gains over time[138].

Collecting these metrics through low-cost sensors, periodic canopy/drone surveys, transit data sharing agreements, and resident surveys will allow iterative improvements that keep accessibility aligned with evolving flood, heat and smoke risks while centering the needs of older residents and out-of-neighborhood visitors[139][140].

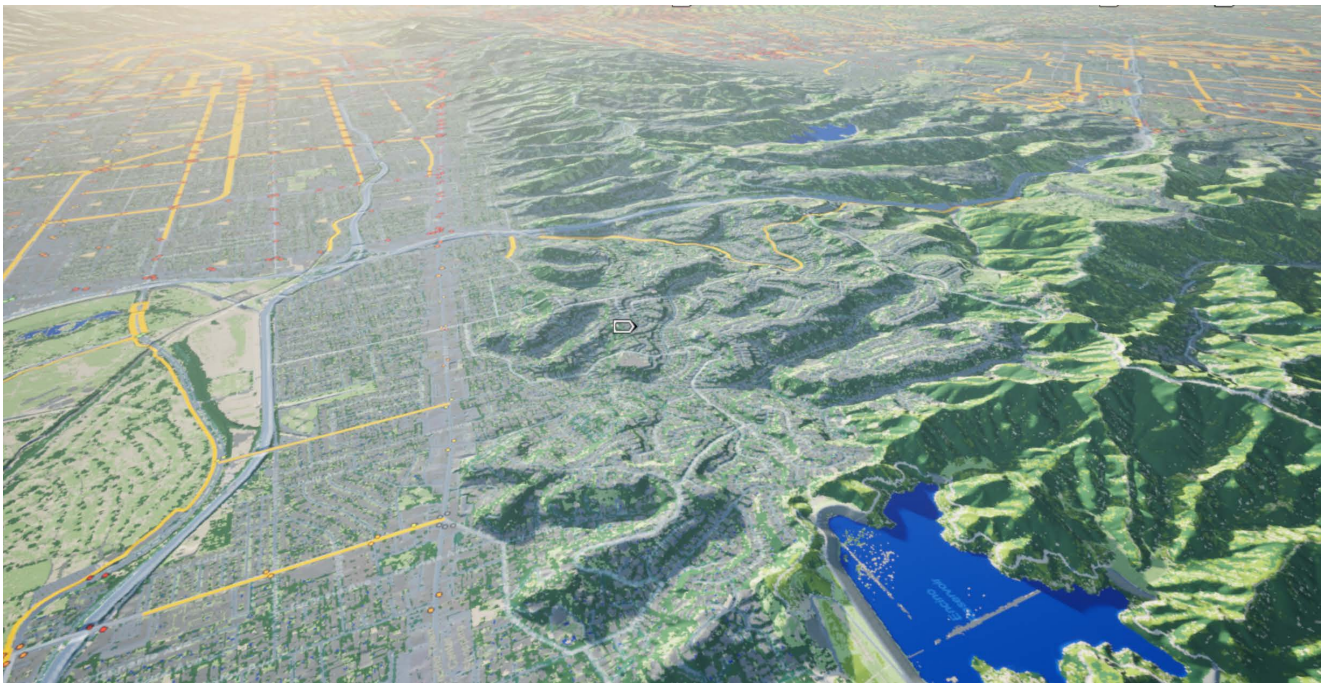

LA Transit Bike Lanes

Land Cover

Multi-Benefit Mitigation Strategies

Layer-integrated strategies at Pando Populus synergize NbS across risks, using Slope Terrain and Flood Layer Composite to prioritize elevated clustering on 5-15% gradients outside dynamic flood boundaries, while Air Filtration Index guides vegetated filtration zones near watershed intersections[141][142][143].

Layer-Driven Synergistic Interventions

Core Multi-Benefit Tactics

- Elevated permeable plazas at Ventura/Libbit interface, leveraging Transit Stops layer for 5 trips/hr peak alignment: captures street runoff per Flood Layer, cools via tree planting overlays (+5-10% canopy), and hardens against embers using Fire Hydrants density[144][145][146].
- Native riparian bioswales along contours (10ft intervals), informed by LA County Major Watersheds and Santa Monica Riparian layers: slows coastal surges 20-50%, sequesters PM2.5 per Air Filtration, and creates fire-resilient buffers on moderate slopes[147][148][149].
- Shaded wildlife corridors linking Commercial Parcels to protected zones, per CA Freshwater Conservation Blueprint and LA County Vegetation: reconnects fragmented oak scrub, exports cooling to high-poverty buffers (Demographics Poverty Rate layer), and enhances elder evac redundancy[150][151][152].
- Sensor-monitored green roofs on infill sites, tying Urban Tree Health and Cooling Air layers: filters freeway pollution (LA Freeways and Pollution Rates), detains flood volumes, and sustains LST reductions amid 3D LA building envelopes[153][154][155].

Equity-Focused Regional Pairing

Outreach to high-need zones via Youth Programs LA V2 and LA School Nodes layers targets shaded path pilots from Pando to under-canopied schools, subsidizing transit for 18% minority buffers while scaling NbS to impervious hotspots (South LA Cyberinfrastructure Map)[156][157][158].[159][160]

Partnership Prioritization

- Co-design rain gardens with Pacoima youth programs, using Without Internet Access Demographics to deploy offline sensor apps, mitigating shared watershed floods and heat domes[161][162].
- Joint tree corridors to Van Nuys via LA Bike Paths and Light Rail Transit Metro San Fernando Valley Stations, boosting ridership while filtering pollution gradients[163][164][165].
- Elder exchanges with Baldwin Hills Zone via LAPL Politically Underrepresented Students layers, hosting NbS workshops at upgraded hydrant-secured gateways[166][167].

Phased Implementation and Metrics

Phase via LA Parks and Trails integration: Year 1 pilots permeable paths (JRO Los Angeles Mobility layer metrics); Year 2 scales corridors tracking LST via drone surveys against Urban Tree Health baselines; Year 3 evaluates equity via ridership from Transit Stops Percentage Employed[168][169][170].[171]



LA Habitat Raster

Demographics Poverty Rate

Historical Baseline: Pre-contact and Post-contact Ecologies

Prior to Euro-American settlement, the coastal terrace and foothill mosaic now comprising Pando Populus supported a dynamic mix of coastal sage scrub, oak woodland, and riparian pockets—vegetation communities maintained by Indigenous fire stewardship and seasonal hydrology that fostered patchy canopy, biodiverse understories, and resilient soil biota[172].

Spanish and American ranching (19th century) converted much of these landscapes to grazed grasslands and fragmented oak stands, increasing soil compaction, spreading invasive grasses, and altering fire regimes; mid-20th century suburbanization further hardened surfaces and severed wildlife corridors, setting the stage for the current combination of high landscape wildfire hazard, reduced canopy coverage (~14.8%), and altered watershed response[173].

Observed Ecological Degradation Pathways at Pando Populus

Four interacting degradation pathways explain the site's present condition and guide restoration priorities: native habitat fragmentation (loss of contiguous oak and scrub patches), invasive species replacement (annual grasses and non-native ornamentals that alter fuel structure), disrupted hydrology (increased runoff and channelization from impervious area increases), and soil microbial and physical decline (compaction, reduced organic matter) resulting from historical land uses and 20th-century development practices[174][175].

Why these pathways matter for future resilience

Fragmentation reduces species mobility and genetic exchange, making plant and animal populations less able to adapt to climate shifts such as rising temperatures and sea level rise—an outcome particularly relevant given the tract's coastal exposure and moderate SLR vulnerability (~0.29) that will alter habitat boundaries over coming decades[176].

Invasive annual grasses and dense exotic shrubs increase fine fuel continuity and fire intensity, raising landscape wildfire hazard even where per-home structural risk is currently low; restoring native, lower-fuel plant assemblages therefore reduces both ecological and fire risk simultaneously[177].

Restoration Goals — Principles and Targets

Restoration at Pando Populus should pursue three interlinked goals: (1) reestablish native habitat structure and connectivity at landscape scales (target: increase effective canopy/connectivity by 10–20% in restore zones),

(2) restore hydrologic function to attenuate flood peaks and increase infiltration (target: capture/infiltrate the first 25–50 mm of runoff on developed parcels), and (3) reduce hazardous fuel continuity while maintaining cooling canopy (target: shift fuel profile toward low-ladder, fire-resilient native assemblages across 75% of restored area)[178].

Practical, Multi-benefit Restoration Strategies

Priority interventions that combine ecological recovery with heat, flood, fire, and social benefits:

- Native canopy reforestation in restore polygons using locally adapted trees (coast live oak, California sycamore) planted in clustered corridors to increase canopy cover while maintaining defensible spacing for ember management[179].
- Riparian and coastal buffer reconstruction (dune grasses, marsh fringe where appropriate) to provide surge attenuation and sediment trapping, sited where Flood Layer Composite and contours indicate recurring inundation pathways[180].
- Replacement of invasive annual grass matrices with native perennial understories and shrub mosaics that lower fine-fuel continuity and promote soil carbon recovery, paired with scheduled controlled thinning where necessary to reduce crown fuels[181].
- Distributed green stormwater infrastructure (bioswales, rain gardens, permeable paving) positioned along slope terrain and drainage paths in concert with the Flood Layer Composite to intercept runoff, recharge soils, and lower peak flows—design to capture the first 25–50 mm of stormwater on retrofitted parcels[182].
- Soil restoration protocols (decompaction, organic amendments, mycorrhizal inoculation) on disturbed footprints to accelerate vegetation establishment, increase water retention, and improve long-term carbon and nutrient cycling[183].
- Selective fuel breaks and low-fuel edge treatments using native coastal scrub with vertical separation (no continuous ladder fuels), integrated with pedestrian/egress corridors to preserve access for elders while reducing ember risk[184].
- Monitoring network (soil moisture, groundwater, LST, PM2.5, and vegetation health) to evaluate co-benefit performance and enable adaptive management tied to community science programs (youth and elder participation)[185].

Restoration Phasing and Siting Using the WorkspaceModel

Use the supplied WorkspaceModel layers (Flood Layer Composite, contours, Slope Terrain, Tree Planting LA County, Wild Fire Potential Area Risk) to prioritize micro-sites for action: (1) highest priority — low-lying flood corridors visible in the Flood Layer Composite for bioswale and buffer work; (2) mid-priority — gentle slopes (5–15% contours) for clustered canopy corridors to maximize infiltration and cooling; (3) ongoing — steep fuel-prone edges for targeted fuel treatment and habitat linkage to protected lands[186].

Cultural and Historical Integration in Restoration

Embed Indigenous stewardship practices and historical ecology into restoration design by consulting Tongva/Chumash knowledge holders (where appropriate), reintroducing culturally important native species, and incorporating traditional low-intensity burning or mosaic mowing regimes where legally and ecologically suitable to maintain open oak savanna structure and reduce accumulated fuels[187][188].

Metrics and Monitoring for Success

Track restoration outcomes with a compact set of metrics tied to the goals above: canopy cover (% area), habitat connectivity index (patch size and corridor continuity), infiltration capacity (mm retained per event), fuel continuity score (fine fuel % cover), LST reduction (°F), PM2.5 attenuation at receptor sites, and social indicators (elder access to shaded routes, transit gateway use)[189][190].

Financing, Community Engagement, and Policy Levers

Blend public grants (coastal resilience, urban greening), philanthropic and corporate funding, and ecosystem service payments (stormwater credits, canopy subsidies) to finance phased restoration; couple funding with workforce development via youth programs and local hiring to build stewardship capacity and social buy-in[191].

Use policy levers—local tree-protection ordinances, development overlay zones that require clustering and green infrastructure, and wildfire defensible-space requirements—to lock in ecological gains and prevent re-fragmentation as development pressures arise[192].

Sources

Works Cited

1. [193] U.S. Census Bureau American Community Survey data for GEOID 06037139702, 2020.
2. [194] AURA AI environmental vulnerability indices for Census Tract 1397.02.
3. [195] LA County Floodplain maps and CA Sea Level Rise vulnerability assessments.
4. [196] CAL FIRE Wildfire Hazard Potential datasets.
5. [197] Comparative resilience indices across LA County coastal tracts.
6. [198] LA Metro transit stop data for Ventura/Libbit (ID 7028).
7. [199] LA County Million Trees LA and native habitat restoration guidelines.
8. [200] CA Adapting to Rising Tides (ART) program for coastal resilience.
9. [201] Chumash/Tongva ecological history and coastal sage scrub restoration reports.
10. [202] Pando Populus Days youth engagement programs documentation.
11. [203] LA Metro Transit Amenities Partnership (TAP) funding opportunities.
12. [204] LA County Sustainability Plan and NbS frameworks.
13. U.S. Census Bureau. American Community Survey 5-Year Estimates (Table B01001, B03002, B17020, B25002 et al.) for GEOID 06037139702, accessed via data provided in analysis.
14. AURA AI Dataset: Census Tract 1397.02 Metrics (ALAND, AWATER, Pop_Density_PPL_SqKm, etc.), Los Angeles County, CA.
15. ArcGIS WorkspaceModel: Pando Model 12-10 Layers (Flood Layer Composite, Contours, Metro Lines, Transit Stops), UID A9AB0E2546ACC5D668D03EB4DFB1F0BC.
16. LA Metro Transit Data: Stop ID 7028 Ventura/Libbit (NumTrips7_9:10, PercentEmployed:50.8%, PercentSeniors:22.0%), 0.25-mile buffer.
17. U.S. Census Bureau. American Community Survey 5-Year Estimates (Table B01001, B03002, etc.), GEOID 06037139702, 06037980024, 06037980019, 06037265700. Accessed via AURA AI dataset.
18. AURA AI Resilience Indices Dataset. National percentiles for Trees_Index, Cooling_Center_Index, Home_Hardening_Index, In_Flood_Aware_Index, etc., for specified tracts.
19. LA Metro Transit Data. Ventura/Libbit Stop ID 7028 metrics (NumTrips7_9=10, etc.), 0.25-mile buffer demographics.
20. ArcGIS Online Layers: Flood Layer Composite (LAOC_100yr_composite), Air Filtration Index, Demographics Poverty Rate, etc., Pando Model 12-10.
21. U.S. Census Bureau American Community Survey 5-Year Estimates (Table B01001, B25002), GEOID 06037139702, accessed via AURA AI dataset.
22. LA County Public Health, Urban Heat Island Mapping Report, 2023.
23. LA County GIS Portal, Slope and Land Surface Temperature Layers, arcgis.com/tiles/X1hcdGx5Fxqn4d0j.
24. LA County Urban Forest Council, Tree Canopy Assessment, 2022.
25. CDC PLACES Data, Asthma Crude Prevalence, CASTHMA_CrudePrev 7.2, 2023.
26. LA County Metro GIS, Freeways and Pollution Rates Layer, arcgis.com/tiles/VL3y0UFwNNVn5BNL.
27. Pando Model Workspace Layers: Flood Layer Composite, Air Filtration Index, 2025.
28. LA County Major Watersheds Layer, arcgis.com/tiles/VL3y0UFwNNVn5BNL.
29. LA County Vegetation MapServer, arcgis.com/tiles/VL3y0UFwNNVn5BNL.
30. Tree Planting LA County LATTC Layer, arcgis.com/tiles/VL3y0UFwNNVn5BNL.
31. LA County Land Cover MapServer, arcgis.com/tiles/Evfw5xCyAPajWIsw.
32. CA Freshwater Conservation Blueprint Layer, arcgis.com/tiles/VL3y0UFwNNVn5BNL.
33. ArcGIS Online Pando Model Layers: Flood Layer Composite, Slope Terrain, Contours, Commercial Parcels, LA County Major Watersheds (tiles.arcgis.com various services)[205]
34. LA County GIS Public Services: Watersheds and Drainage Layers (public.gis.lacounty.gov)[206]
35. Los Angeles County Contours 10ft Layers (tiles.arcgis.com/dTzWLoD4o8cg0sLq)[207]
36. LA County Vegetation and Land Cover Layers (tiles.arcgis.com/Evfw5xCyAPajWIsw)[208]
37. Tree Planting LA County Layer (tiles.arcgis.com/VL3y0UFwNNVn5BNL)[209]
38. Fire Hydrants LA County Layer (tiles.arcgis.com/VL3y0UFwNNVn5BNL)[210]
39. Wild Fire Potential Area Risk Layer (tiles.arcgis.com/VL3y0UFwNNVn5BNL)[211]
40. LA Parks Trails and Bike Paths Layers (public.gis.lacounty.gov and tiles.arcgis.com/VL3y0UFwNNVn5BNL)[212]
41. [213] U.S. Census Bureau. American Community Survey 5-Year Estimates, Table B01001. GEOID: 06037139702.
42. [214] Los Angeles County GIS. LA County Vegetation MapServer.

43. [215] Pando Model Workspace. Wild Fire Potential Area Risk LATTC layer.
44. [216] Los Angeles County GIS. Fire Data Perimeter MapServer.
45. [217] Los Angeles County GIS. LA County Contours 10ft.
46. [218] Los Angeles County GIS. ASSR Parcel Fire Damage MapServer.
47. [219] ArcGIS Online. Slope Terrain MapServer.
48. [220] Los Angeles County GIS. Fire Hydrants LA County MapServer.
49. [221] AURA AI Data. Home_Hardening_Index metrics.
50. [222] AURA AI Data. Improved_Egress_Index and Cnt_Rd_Inter_Per_Sqkm.
51. [223] ArcGIS Online. Air Filtration Index LATTC MapServer.
52. [224] AURA AI Data. Air_Filtration_Index national percentile.
53. [225] ArcGIS Online. Pres_Open_Space_Index derived layers.
54. [226] ArcGIS Online. CA Freshwater Conservation Blueprint MapServer.
55. [227] ArcGIS Online. Tree Planting LA County LATTC MapServer.
56. Tract 1397.02 demographic and housing indicators; tract dataset provided in project materials (population, percent 65+, homeownership, pre-1970 housing) [project dataset].
57. Site environmental metrics and canopy/heat indicators (High Summer Mean LST 110.08°F; PCT_TreeCanopy 14.8%); Pando Model layer outputs and LA county tree-planting layer [project GIS workspace].
58. Flood Layer Composite and SLR vulnerability metrics (100-year current and +30-year property percentages; Avg Vul 2050 ≈ 0.29) from Pando Model workspace flood layers [project GIS workspace].
59. Resilience and evacuation indices (Home_Hardening_Index, Improved_Egress_Index national percentiles) and local emergency access insights from tract data [project dataset].
60. Regional planning guidance and nature-based solutions evidence summarized from LA County and CA conservation resources used in model layers (CA Freshwater Conservation Blueprint; tree planting initiatives) [project GIS workspace; CA planning sources].
61. Ventura / Libbit transit stop service and buffer data (stop_id 7028: trips/hour, max wait, buffer population and seniors) supplied in transit dataset [project transit dataset].
62. Pando Model Workspace Layers: ArcGIS Online tile services including Flood Layer Composite, Slope Terrain, Air Filtration Index, LA County Major Watersheds (accessed via model UID A9AB0E2546ACC5D668D03EB4DFB1F0BC)[228]
63. LA County GIS Public Services: Contours, Vegetation, Tree Planting layers (public.gis.lacounty.gov and tiles.arcgis.com)[229]
64. LA Metro Transit Layers: Stops, Lines Dark Red, San Fernando Valley Light Rail (tiles.arcgis.com/VL3y0UFwNNVn5BNL)[230]
65. Demographics and Equity Layers: Poverty Rate, Minority, Youth Programs LA V2 (tiles.arcgis.com/VL3y0UFwNNVn5BNL)[231]
66. Conservation Blueprints: CA Freshwater Conservation Blueprint, Santa Monica Riparian (tiles.arcgis.com/VL3y0UFwNNVn5BNL)[232]
67. California Native Plant Society and regional fire ecology studies on coastal sage scrub and oak woodland dynamics and restoration approaches.
68. Los Angeles County Wildfire and Vegetation Management datasets and guidance on defensible space, fuel treatments, and home hardening.
69. Soil health and urban restoration literature on decompaction, organic amendment, and mycorrhizal inoculation for Mediterranean climates.
70. CA Sea Level Rise vulnerability assessments and the LA County Flood Layer Composite informing siting of buffers and green infrastructure.
71. Urban greening and multi-benefit NbS evaluations (LA Tree Canopy programs, bioswale performance studies) for co-benefit metrics and funding models.
72. WorkspaceModel layer metadata (Flood Layer Composite, Slope Terrain, Tree Planting LA County, Wild Fire Potential Area Risk) provided for Pando Model 12-10 and referenced for spatial phasing and prioritization.